Detailed Resettlement Plan

September 2025

CAM: Second Urban Environmental Management in the Tonle Sap Basin Project

Resettlement Report on the Change in Alignment of the Four (4) Sewerage Lines under the Wastewater and Drainage Subproject - Serei Saophoan

Prepared by General Department of Resettlement of the Ministry of Economy and Finance for the Royal Government of Cambodia.

CURRENCY EQUIVALENTS[1]

Currency unit	–	riel (KHR)
KHR1.00	=	USD 0.0002495
USD1.00	=	KHR4,007

ABBREVIATIONS

ADB	Asian Development Bank
AH	Affected Household
AHH	Affected Household Head
AP	Affected Person
COD	Cut-off-Date
COI	Corridor of Impact
DED	Detailed Engineering Design
DIMDM	Department of Internal Monitoring and Data Management
DMS	Detailed Measurement Survey
DRP	Detailed Resettlement Plan
DTL	Deputy Team Leader
GDR	General Department for Resettlement
GRC	Grievance Redress Committee
GRM	Grievance Redress Mechanism
IR	Involuntary Resettlement
IRC	Inter-ministerial Resettlement Committee
IRC-WG	Inter-ministerial Resettlement Committee Working Group
LAR	Land Acquisition and Resettlement
MEF	Ministry of Economy and Finance
MPWT	Ministry of Public Works and Transport
PCM	Public Consultation Meeting
PGRC	Provincial Grievance Redress Committee
PIB	Public Information Brochure
PIU	Project Implementation Unit
PMC	Project Management Consultant
PMU	Project Management Unit
PRSC-WG	Provincial Resettlement Sub-Committee-Working Group
RCS	Replacement Cost Study
ROW	Right-of-Way
SES	Socio-Economic Survey
TS2	Second Urban Environmental Management in the Tonle Sap Basin
WWTP	Wastewater Treatment Plant

NOTES

(i) The fiscal year (FY) of the Government of Cambodia ends on 31 December.
(ii) In this report '$" refers to US dollars.

[1] Source: National Bank of Cambodia dated August 2025.

This resettlement report is a document of the borrower. The views expressed herein do not necessarily represent those of ADB's Board of Directors, Management or Staff, and may be preliminary in nature.

In preparing any country program or strategy, financing any project, or by making any designation of or reference to a particular territory or geographic area in this document, the Asian Development Bank does not intend to make any judgments as to the legal or other status of any territory or area.

DEFINITION OF TERMS[2]

Affected Household	–	In the case of an affected household, it includes all displaced/affected persons residing under one roof and operating as a single economic unit, who are adversely affected by the project or any of its components.
Affected Persons	–	In the context of involuntary resettlement, affected persons are those who are physically displaced (relocation, loss of residential land, or loss of shelter) and/or economically displaced (loss of land, assets, access to assets, income sources, or means of livelihoods) as a result of (i) involuntary acquisition of land, or (ii) involuntary restrictions on land use or on access to legally designated parks and protected areas.
Compensation	–	Refers to payment in cash or in kind for an asset or resource that is acquired or affected by a Project at the time the asset needs to be replaced. All compensation is based on the principle of replacement cost, which is the method of valuing assets to replace the loss at current market rates, plus any transaction costs such as administrative charges, taxes, registration and titling costs. In applying this method of valuation, depreciation of structures and assets should not be considered.
Corridor of Impact	–	(i) Permanent. It is an area which is required to be permanently acquired by GDR for easement of the civil work and their unhindered operation & maintenance in the future, and it is agreed and demarcated by the executing agency. The exact location of the permanent boundaries of the easement may be required for formal confirmation of boundaries in the cadastral records. (ii) Temporary. It is the area within which the temporary construction activities and movements of equipment will take place during the Project implementation. The extent of the area is somewhat dependent on the types of construction method and machinery used by the contractor. Such impacts and associated remedial measures and costs are typically borne by the contractor at his own expenses depending on the contractual details.
Consultation	–	A process that (i) begins early in the project preparation stage and is carried out at different stages of the project and land acquisition and involuntary resettlement cycle; (ii) provides timely disclosure of relevant and adequate information in Khmer Language that is understandable and readily accessible to AP; (iii) is undertaken in an atmosphere free of intimidation or coercion with due regard to cultural norms; and (iv) is gender inclusive and responsive, and tailored to the needs of disadvantaged and vulnerable groups; enables to consider the incorporation of all relevant views of affected people and other stakeholders into decision making, such as project design, mitigation measures and implementation issues.
Cut-off date	–	This refers to the date after which people will not be eligible for compensation or assistance. Those persons occupying or using the project prior to the identified date are eligible to be categorized as AHs and to receive compensation and/or assistance. Persons not covered in the census are not eligible for compensation and other entitlements unless they can show proof that (i) they have been inadvertently missed

[2] Same as those in the March 2021 approved DRP

out during the census and the inventory of losses (IOL); or (ii) they have lawfully acquired the affected assets subsequent to the completion of the census and the IOL and before the conduct of the detailed measurement survey.

Detailed Measurement Survey	–	With the aid of detailed engineering design, this activity involves the finalization of the inventory of losses, severity of losses, measurement of additional losses, and 100% coverage of Socio-economic Survey and 100% census of affected persons.
Displaced Household	–	Any household physically and/or economically directly affected because of land acquisition and involuntary resettlement. Household means all persons living and eating together as a single social unit.
Displaced Persons	–	In the context of involuntary resettlement, displaced persons are those who are physically displaced (relocation, loss of residential land, or loss of shelter) and/or economically displaced (loss of land, assets, access to assets, income sources, or means of livelihoods) as a result of (i) involuntary acquisition of land, or (ii) involuntary restrictions on land use or on access to legally designated parks and protected areas. The SPS uses the term 'affected person" (AP) in a broader sense in the context of consultations, disclosure, and grievance redress mechanism that includes persons not directly affected by an ADB project. However, the executing agency understands and uses the term AP as what the SPS calls DP. Accordingly, the term AP is used in this report.
Economic Displacement	–	Refers to loss of land, assets, access to assets, income sources, or means of livelihood because of (i) involuntary acquisition of land, or (ii) involuntary restrictions on land use or on access to legally designated parks and protected areas.
Eligibility	–	Refers to any person or persons, household, firm, private or public institution who has settled in the project area before the cut-off date, that (i) loss of shelter, (ii) loss of assets or ability to access such assets, permanently or temporary, or (iii) loss of income sources or mean of livelihood, regardless of relocation will be entitled to be compensation and/or assistance.
Entitlement	–	Refers to a range of measures comprising compensation, income restoration support, transfer assistance, relocation support, etc. which are due to the APs, depending on the type and severity of their losses, to restore their economic and social base.
Grievance Redress Mechanism	–	Refers to an established mechanism to receive and facilitate the resolution of affected persons' concerns and grievances/ complaints about physical and economic displacement and other project impacts, paying particular attention to the impacts on vulnerable groups.
Income Restoration	–	Refers to re-establishing productive livelihood of the APs to enable income generation equal to or, if possible, better than that earned by the APs before the resettlement or of pre-project levels.
Inventory of Losses	–	This is the process where all fixed assets (i.e. lands used for residence, commerce, agriculture, including ponds; dwelling units; stalls and shops;

		secondary structures, such as fences, tombs, wells; trees with commercial value; etc.) and sources of income and livelihood inside the project right-of-way are identified, measured, their owners identified, their exact location pinpointed, and their replacement costs calculated. Additionally, the severity of impact to the affected assets and the severity of impact to the livelihood and productive capacity of APs will be determined.
Involuntary Resettlement	–	Refers to when displaced persons have no right to refuse land acquisition by the state that result in their displacement which occurs when land is acquired through (i) expropriation by invoking the eminent domain power of the state, or (ii) land is acquired through negotiated settlement when the pricing is negotiated, and the failure will result in expropriation through invoking the eminent domain of power of the state.
Land Acquisition	–	Refers to the process whereby an individual, household, firm or private institution is compelled by a public agency to alienate all or part of the land it owns or possesses to the ownership and possession of that agency for public purposes in return for compensation at replacement costs.
Major Impacts	–	Refers to AHs who will (i) lose 10% or more of their total productive land and/or assets; (ii) have to physically and permanently relocate; and/or (iii) lose 10% or more of their total income source due to the Project.
Physical Displacement	–	Refers to relocation, loss of residential land, or loss of shelter because of (i) involuntary acquisition of land; or (ii) involuntary restrictions on land use or on access to legally designated parks and protected areas.
Relocation	–	This is the physical relocation of a displaced person from their pre-project place of residence and/or business.
Replacement Cost	–	Replacement cost involves replacing an asset at a cost prevailing at the time of its acquisition. This includes fair market value, transaction costs, interest accrued, transitional and restoration costs, and any other applicable payments, if any. Depreciation of assets and structures should not be considered for replacement cost. Where there are no active market conditions, replacement cost is equivalent to delivered cost of all building materials, labor cost for construction, and any transaction or relocation cost. Where land market conditions are absent or in a formative stage, the APs and host populations will be consulted to obtain adequate information about recent land transactions, land value by types, land titles, land use, cropping patterns and crop production, availability of land in the project area and region, and other related information.
Replacement Cost Study	–	This refers to the process involved in determining replacement costs of affected assets and land and performed by an independent qualified national consultant (firm or individual) with the necessary expertise to carry out asset valuation.
Resettlement Framework	–	The Resettlement Framework sets out the criteria for screening subprojects on their resettlement impacts and provides guidance in preparing Resettlement Plans for eligible subprojects with insignificant resettlement impacts. It defines the objectives, principles, eligibility criteria

and entitlements for displaced persons based on (i) Asian Development Bank's Safeguards Policy Statement, 2009; and (ii) the Royal Government of Cambodia laws and regulations.

Resettlement Plan	–	This is a time-bound action plan, with budget, setting out the resettlement objectives and strategies, entitlements the income and livelihood restoration strategy, institutional arrangements, monitoring and reporting framework, budget, and implementation schedule. The outline Resettlement Plan is in Annex to Appendix 2 of the ADB Safeguard Policy Statement (2009).
Right-of-Way	–	It is a government owned strip of land following a centerline (such as for roads, canals, etc.) providing an area of access.
Vulnerable Groups	–	These are distinct groups of potential APs who are likely to be more adversely affected than others and who are likely to have a limited ability to re-establish their livelihoods or improve their status and specifically include: • all the household living below the national poverty rate established by the Government;[3] • female headed households with dependents living below the national poverty rate, • disabled household heads with no other means of support, • elderly households who are landless and with no other means of support, • landless poor living below the national poverty rate, and • indigenous people or ethnic minorities (who often have traditional land rights but no formal titles).
Willing Buyer Willing Seller	–	Process where the Government purchases a property from private owner with a fair market value, which a willing seller approves. In the arrangement neither party is being under any compulsion to buy or to sell and both having reasonable knowledge of relevant facts, and eminent domain is not used.

[3] This includes squatters and those without land titles.

Contents

I. Project Description 9
II. Detailed Measurement Survey 12
III. Scope of Land Acquisition and Involuntary Resettlement (LAR) Impacts 9
IV. Socio-economic Information and Profile 15
V. Legal Framework 16
VI. Information Disclosure, Consultation and Participation 16
VII. Grievance Redress Mechanism 17
VIII. Entitlements, Assistance and Benefits 17
IX. Estimated Resettlement budget 23

List of Figures

Figure 1: Change in alignment Sewerage Lines on PR56, NR5, and BMC Road 10
Figure 2: Example (a) of change in sewerage alignment with old and new COI 11
Figure 3: Example (b) of change of sewerage alignment with old and new COI 12

List of Tables

Table 1: Summary of LAR Impacts by Type 13
Table 2: Summary of the Key Topics Discussed during the PCMs with AHs by Gender 16
Table 3: Summary of Key Questions and Responses 17
Table 4: Entitlement Matrix 19
Table 5: Estimated Resettlement Budget 23

List of Annexes

Annex 1: Breakdown of Affected Assets 25
Annex 2: Combined Minutes of Public Consultation Meetings Prior to the Detailed Measurement Survey 26
Annex 3: Updated Public Information Brochure (PIB) on Change in Alignment of Four (4) Sewerage Lines under Wastewater and Drainage Subproject - Serei Saophoan 31

I. Executive Summary

A. Project and Subproject Description

1. The Second Urban Environmental Management in the Tonle Sap Basin (the Project) funded by the Asian Development Bank (ADB) will improve the urban environmental services in Battambang, Serei Saophoan and Stung Saen, three provincial cities located around the Tonle Sap Lake. The Project will also improve institutional effectiveness to provide sustainable services and support an improved policy and planning environment for wastewater and solid waste management.

2. The Project is financing two subprojects in Serei Saophoan city. The Detailed Resettlement Plan (DRP) for the Wastewater and Drainage and Solid Waste Management Subprojects in Serei Saophoan was approved in March 2021. A Resettlement Report on additional scope on Drainage Line B was prepared and approved in April 2024. Compensation payments under the DRP and Resettlement Report are complete. This Resettlement Report is prepared for the change in alignment of four (4) sewerage lines on PR56A, BMC Bank Road and NR5 (2 lines) under the Wastewater and Drainage Subproject and should be read in conjunction with the March 2021 approved DRP.

3. The change in alignment will impact 74 affected households (AHs)/259 affected persons (APs). No AH is physically displaced, 74 AHs are economically displaced as they encounter partial or marginal economic impacts, and no AH is physically and economically displaced. The involuntary resettlement (IR) impacts include the loss of secondary structures, fruit trees and non-fruit trees. There are no roadside vendors or mobile stalls, no major impacts, no permanent loss of livelihoods, no losses or disruptions to businesses during construction, no vulnerable AHs and no relocation of any AH to another site.

4. The cost for all compensation and resettlement assistance for the realignment of four (4) sewerage lines will be financed from the national budget, and no financing will be required from the ADB loan and grant. The resettlement budget is estimated at **$36,108.86.** The Ministry of Public Works and Transport (MPWT) as the executing agency through a Project Management Unit (PMU), which will support MPWT to undertake overall oversight and management of the Project. However, under the oversight of the Inter-ministerial Resettlement Committee (IRC), the General Department of Resettlement (GDR) of the Ministry of Economy and Finance (MEF), through its Resettlement Department 3, will be the lead agency directly responsible for updating, implementing, reporting and monitoring the Resettlement Report.

II. Project Description

(i) Background

1. The Second Urban Environmental Management in the Tonle Sap Basin (TS2), or the Project) funded by the Asian Development Bank (ADB) will improve the urban environmental services in Battambang, Serei Saophoan and Stung Saen, three of Cambodia's provincial cities located around the Tonle Sap Lake. The Project will also improve institutional effectiveness to provide sustainable services and support an improved policy and planning environment for wastewater and solid waste management.

2. The Detailed Resettlement Plan (DRP) for the Wastewater and Drainage and Solid Waste Management Subprojects in Serei Saophoan was approved in March 2021. A Resettlement Report on additional scope on Drainage Line B under Wastewater and Drainage Subproject was approved in April 2024. This Resettlement Report is prepared for the change in alignment of four (4) sewerage lines on PR56A, BMC Bank Road and NR5 (2 lines) under the Wastewater and Drainage Subproject as illustrated in (**Figure 1**). The change in alignment is within the right-of-way (ROW) of the roads as defined in the approved March 2021 DRP, whereas the corridor-of-impact (COI) of the alignments has been adjusted following careful assessment of resettlement impact avoidance and minimization process. This Resettlement Report should be read in conjunction with the March 2021 approved DRP.

Figure 1: Change in alignment Sewerage Lines on PR56A, NR5, and BMC Road

3. Originally, the alignment of the sewerage lines was designed to be on the shoulder of the main roads. During the subproject construction it was noticed that the sewerage line alignments within distance of 2.60km overlapped with the underground public utilities of water

supply mains and electricity lines. While placing sewerage line close to water supply pipes and electricity cables is not advisable, the construction close to these utilities is risky due to potential damage during construction which may cause significant disruption to the public services for residents and businesses. It was not possible to adjust the sewerage alignment towards the road centerline as this would not only be costly but also disrupt heavy traffic and result in difficult maintenance of the sewerage lines. Subsequently, the construction contractor attempted to move the sewerage lines towards or under the sidewalks but encountered an overlap with the main stormwater drain which prevented moving of the alignment. Therefore, the provincial authorities in December 2024 proposed to realign all the overlapping sections of the 2.60km sewerage lines onto the road sidewalks. However, several sections of the road sidewalks have existing encroachment from the households and businesses located along the roads, resulting in involuntary resettlement (IR).

4. The new COI was prepared following a detailed roadside and underground utility survey and technical feasibility assessment conducted by the provincial authorities, the construction contractor, representatives of the utility companies, and the Project Management Consultant (PMC) from December 2024 to April 2025. The updated detailed engineering design (DED) was completed in April 2025 (**Figures 2 and 3**).

Figure 2: Example (a) of change in sewerage alignment with old and new COI

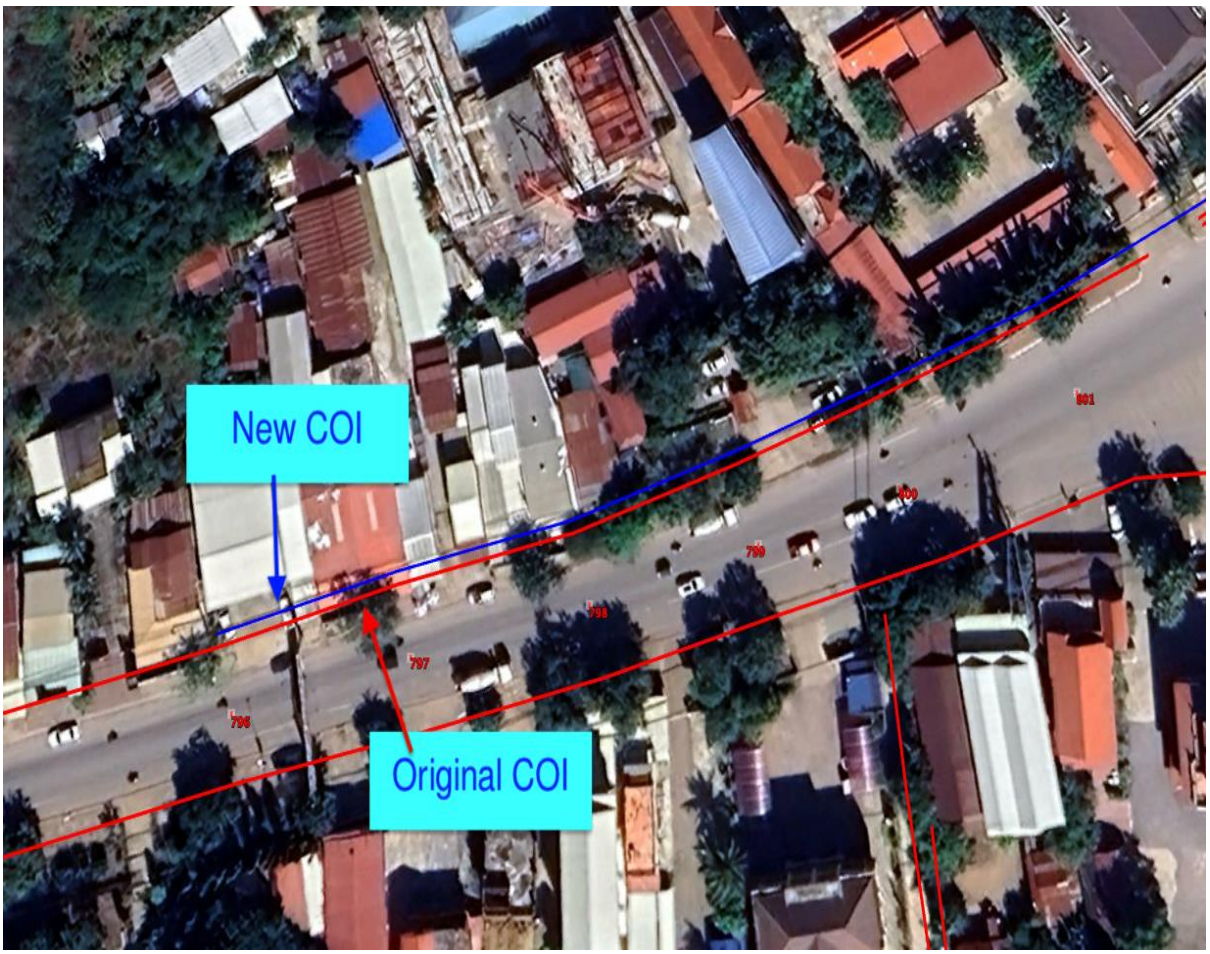

Figure 3: Example (b) of change of sewerage alignment with old and new COI



(ii) Detailed Measurement Survey

5. A joint site visit by the Inter-ministerial Resettlement Committee Working Group (IRC-WG), Provincial Resettlement Sub-Committee Working Group (PRSC-WG), Project Implementation Unit (PIU), Project Management Unit (PMU), PMC and construction contractors with the assistance of local authorities was undertaken on 26 March 2025. The DED and COI for the change in realignment sections were submitted to the General Department of Resettlement (GDR) on 5 May 2025. The site demarcation was carried out and completed on 4 April 2025 and updated on 6 May 2025. Prior to detailed measurement survey (DMS)/socio economic survey (SES), public consultation was conducted on 7 May 2025. During the DMS/SES from 7-25 May 2025, the IRC-WG and PRSC-WG individually consulted with all affected households (AHs) on a one-to-one basis with the assistance of the local authorities. The SES was conducted in parallel with the DMS using the DMS questionnaire, which contained questions on demographic and socio-economic status disaggregated by gender. As a result, there are 74 AHs/259 affected persons (APs) who have been impacted by the change in alignment.

(iii) Measures Adopted to Minimize Resettlement

6. For the change in alignment of the sewerage lines, the IRC-WG worked closely with the PIU and PMC resettlement specialists and the engineering design team on the ground to avoid and mitigate IR impacts. Based on the preliminary design of the sewerage lines, a total of 130 AHs were estimated to be impacted. However, following recommendations made by the IRC-WG to avoid and mitigate IR impacts the final impact was reduced to 74 AHs. The avoidance of a total of 56 AHs was achieved through adjusting the sewer alignment going around the permanent structures and public utilities on the sidewalk, removing unfeasible sewer

sections which would require household level pumping to reach the collector sewer, changing sewer flow direction for short sections by going around permanent structures was not possible, and use of hand digging.

III. Scope of Land Acquisition and Involuntary Resettlement (LAR) Impacts

A. Summary of LAR Impacts

7. Based on the DMS/SES conducted in May 2025, a total of 74 AHs who are business owners/259 APs have been impacted by change in alignment of the four (4) sewerage lines. No AH is physically displaced, 74 AHs are economically displaced as they encounter partial or marginal economic impacts, and no AH is physically and economically displaced. The IR impacts include the loss of secondary structures (fences, signage, extended eaves and a concrete post) totaling 670.24m^2 of 65 AHs and 2.00m of 1 AH, 16 fruit trees of 15 AHs and 6 non-fruit trees of 5 AHs. None of the trees are planted or grown for commercial purposes. There are no roadside vendors or mobile stalls, no major impacts, no permanent loss of livelihoods, no losses or disruptions to businesses during construction, no vulnerable AHs and no relocation of any AH to another site. **Table 1** summarizes the LAR impacts by type for change in alignment with detail breakdowns in **Annex 1**.

Table 1: Summary of LAR Impacts by Type under the Change in Alignment

No.	Affected Assets	Quantity (measurement units)
1	Affected Households/Affected Persons	74 AHs/259 APs
2	Physically Displaced	None
3	Economically Displaced	74 AHs
4	Physically and Economically Displaced	None
5	Primary Structures (commercial)	None
6	Secondary Structures (commercial)	670.24m^2 of 65 AHs, 2.00m of 1 AH
7	Fruit Tress (various)	16 of 15 AHs
8	Non-fruit Trees (various)	6 of 5 AHs
9	Major Impact	None
10	Permanent Loss of Livelihood	None
11	Relocation to another site	None
12	Vulnerable AHs	None

Source: DMS Data, 7–25 May 2025

B. LAR Impact by Type

(i) Impact on Land

8. There is no impact on privately owned land or used land as all works will be undertaken on unencumbered public land within the right-of-way (ROW) of the roads. Therefore, there is no compensation for land within the ROW.

(ii) Impact on Structures

9. There is no impact on primary structures (houses). However, there will be impact on secondary structures comprising brick fences, sign boards and extended eaves of 670.24m^2 of 65 AHs and 2.00m of concrete posts of 1 AH. **Table 2** summarizes the impact on secondary structures, and the detailed breakdown is in **Annex 1** of this Resettlement Report.

Table 2: Summary of Impacts on Structures

No.	Type of Structure	No. of AHs	Unit of Measurement		
			m^2	m	No.
Primary Structures					
1	Houses	-	-	-	-
Secondary Structures					
1	Brick fences with various types of materials	8	80.56	-	-
2	Sign Boards	12	188.15	-	-
3	Extended eaves	45	461.31	-	-
4	Concrete Posts	1	-	2.00	-
	Total	**65**	**670.24**	**2.00**	**-**

Source: DMS Data, 7–25 May 2025

(iii) Impact on Crops and Trees

10. No crops are affected by the change in the alignment of the four sewerage lines. However, a total of 22 trees of 20 AHs on state-owned will be affected. These include 16 fruit trees of 15 AHs and 6 non-fruit trees of 5 AHs. All affected trees planted or grown are not for commercial use. All affected trees will be compensated as per the entitlement matrix. **Tables 3** summarizes the affected crops and trees with the detailed breakdown of trees names and numbers provided in **Annex 1**.

Table 3: Summary of Impact on Crops and Trees

Category	No. of AHs	Unit of Measurement	
		m^2	No.
Crops	-	-	N/A
Fruit Trees	15*	N/A	16
Non-Fruit Trees	5*	N/A	6
Total	**20***	**-**	**22**

* Several AHs have more than one type of tree impacted
Source: DMS Data, 7–25 May 2025

(iv) Other Impacts

11. As summarized in Table 1, no AHs experience any major impacts, permanent loss of livelihood, relocation to another site and there are no vulnerable AHs.

C. Temporary Impacts

12. As the civil works will be carried out within existing road ROW, public facilities such as existing roads of bituminous surface and walkways will be temporarily impacted during construction. Design of the wastewater and storm water networks includes the improvement of roads and sidewalks along the alignments. Thus, these temporarily affected public facilities will not just be restored but will be enhanced after construction as part of the Subproject design. This temporary impact also concerns the movement and storage of construction equipment and materials.

13. The civil works contract as well as environmental management plan will also require the construction contractor to reinstate the temporary private structures within the COI and any impacted structures along the construction works area to their pre-Subproject condition after the installation of sewerage pipes is completed, including pavements/walkways, roadside kerbs, signposts, spirit houses and eaves. If reinstatement is not possible, any impact caused by the contractor during construction will be compensated by the contractor at replacement cost based

on the entitlement matrix. The contractor is to record the pre-Subproject situation with drawings and georeferenced pictures.

14. For any temporary site installation or other area, the contractor will have to propose it/them in a site installation and access plan and obtain approval from the PMU. Where possible, unoccupied, and unused public land will be used for temporary land use or storage. The contractor shall rent the private area with an agreed rental fee. Both private and public areas shall be returned in the same or improved condition compared with pre-Subproject level. Through a transparent and contractual approach, the PMU will provide the contractor with the Subproject's land acquisition and compensation principles to ensure that (i) official compensation rates are applied, (ii) re-instatement of affected assets contractually defined, (iii) consultation takes place, (iv) the grievance mechanism is followed, (v) the environmental management plan is applied, and (vi) other items specified are complied with, in compliance with the ADB Safeguard Policy Statement and the Royal Government of Cambodia's Land Acquisition and Involuntary Resettlement Standard Operating Procedures .

D. Unanticipated Impact

15. In case there are further changes in the alignment of the four (4) sewerage lines and/or location during its implementation, social impact screening of new impacts shall be conducted, and a corrective action plan prepared, if required. Unanticipated impacts will be documented and mitigated based on the principles provided in this DRP. Any new APs that will be identified (i.e., those who will be included among the adversely affected because of changes in the alignment of the four (4) sewerage lines design or alignment prior to or even during construction works) are entitled to the same entitlements as those of the other APs. The new APs will not include any occupant entering the COI or construction area after the cut-off-date (COD).

IV. Socio-economic Information and Profile

16. The SES was conducted in May 2025 with a total of 74 AHs/259 APs comprising of 61 (82.43%) male and 13 (17.57%) female headed AHs, representing 100.00% of the AHs impacted by the change in alignment of the four (4) sewerage lines. Of the 259 APs, 130 (50.19%) are male and 129 (49.81%) are female comprising 15 (5.79%) APs under 5 years old, 31 (11.97%) between 5-16 years, 44 (16.99%) between 17-25 years, 78 (30.12%) between 26-45 years, 64 (24.71%) between 46-60 years, 26 (10.04%) between 61-80 years and 1 (0.39%) over 80 years.

17. The majority or 30 (40.54%) affected household heads (AHHs) comprising 27 males and 3 females are aged 46-60 years followed by 22 (29.73%) comprising 17 males and 5 females aged 31-45 years, 18 (24.32%) comprising 15 males and 3 females aged 61-80 years and 4 (5.41%) comprising 2 males and 2 females aged 20-30 years. A total of 68 (91.89%) AHHs comprising 58 males and 10 females are married, 5 (6.75%) comprising 3 males and 2 females are unmarried, and 1 (1.35%) female is widowed. All 74 (100.00%) AHHs are Cambodians of Khmer ethnicity and there are no indigenous people. All 74 (100.00%) AHHs completed some form of education with 19 (25.68%) comprising 14 males and 5 females completing primary school, 25 (33.78%) comprising 21 males and 4 females completing secondary school, 29 (39.19%) comprising 25 males and 4 females completing a university degree and 1 (1.35%) male completing vocational training.

18. The main/secondary sources of livelihood and annual household incomes reported include income earned by all APs in the household (household heads and family members).

Trade/own business was the largest main source of livelihood reported with 57 (77.03%) comprising 49 male and 8 female headed AHs followed by 8 (10.81%) male headed AHs in the government sector, 8 (10.81%) comprising 4 male and 4 female headed AHs in the private sector and 1 (1.35%) male headed AH in other income activities. Furthermore, 20 (27.03%) AHs reported having secondary sources of livelihood. For annual household incomes, 1 (1.35%) male headed AH declared earning between $3001 -$4999, 1 (1.35%) female headed AH declared earning $5,000 - $6,999, 6 (8.11%) comprising 4 male and 2 female headed AHs declared earning $7,000 - $9,999 and 66 (89.19%) comprising 56 male and 10 female headed AHs declared earning $10,000 or more. No AHs were identified as poor and vulnerable (provided an ID Poor Card) during the DMS/SES interviews.

19. **Indigenous Peoples**. Based on the interviews during the SES, all the 74 AHHs were confirmed Cambodians of Khmer ethnicity, and no indigenous people were identified in the COI of the realignment of the four (4) sewerage lines.

V. Legal Framework

20. The legal framework in the approved DRP for the Subproject under the TS2 Project will apply for the change in alignment of the four (4) sewerage lines.

VI. Information Disclosure, Consultation and Participation

21. Public consultation and participation aim to develop and maintain avenues of communication between the Project/Subproject stakeholders and the AHs. To ensure that the views and concerns of the AHs are considered in Project/Subproject preparation and implementation, and to reduce or offset adverse impacts and enhance benefits, a strategy of meaningful participatory process was adopted and implemented for consultation participation and information disclosure. All consultations were conducted verbally in Khmer using visual tools such as maps and drawings, so all AHs could fully understand and be able to participate.

22. During the public consultation meetings (PCMs), the AHs and/or participants were informed about the Subproject and the change in alignment of the four (4) sewerage lines from the road pavement of PR56A, NR5 (2 lines), and BMC Bank Road to their roadside footpaths. The Public Information Booklet (PIB) (**Annex 3**) was distributed and read out. PCMs were conducted with 20 AHs on 7 May 2025 attended by 20 participants out of which 3 were females. While the information on the schedule of the PCM was disseminated to all the AHs, the low turnout of the AHs to the PCMs were due to their prior commitments to their urgent work and activities. During house-to-house DMS, the PIB and DMS questionnaire were read out and explained to all individual AHHs ensuring that all the 74 AHs were consulted. The Minutes of the PCMs are in **Annex 2**. **Table 4** summarizes the key topics discussed during PCMs with the AHs by gender.

Table 4: Summary of the Key Topics Discussed during the PCMs with AHs by Gender

No	Date/Time	Meeting Venue	Summary of Key Topics Discussed	No. of AHs
1	07 May 25/08:00	Kompong Svay Primary School	• The design parameters of the change in alignment of four (4) sewerage lines • Resettlement impacts, benefits and mitigation measures • Entitlements, eligibility and compensation for lost assets • COD	10 (1 Female, 9 Male)
2	07 May 25/14:30	Samathipal Pagoda		10 (2 Female, 8 Male)

			• GRM including contacts of grievance redress committee (GRC) focal persons in the event of complaints • DMS Questionnaire and DMS processes and procedures with joint participation of the AHs.	
	Total			**20 (3 Female, 17 Male)**

23. The participants were informed that the COD was set as **7 May 2025**. They were further informed that after this COD, any person who moves into or encroaches on the ROW of the roads to build or expand any kind of structure such as house, shop, fences and/or to plant any kind of trees, crops, will **NOT** be entitled to any compensation or any other assistance, except if changes in the subproject design or additional land take entail a modification of the subproject area. The Commune and Village Chiefs were informed to keep an oversight that no activities take place within the ROW.

24. All concerns and views raised by the participants during the PCMs have been considered and incorporated into this Report. The key questions raised, and responses are summarized in **Table 5**.

Table 5: Summary of Key Questions and Responses

No.	Ky Issues/Questions	Responses
1	I have an impact on some structures and trees. Will there be any compensation for that?	If the impacts to your assets are within the COI and they were there before the COD, they will be compensated at full replacement cost.
2	I would like to suggest that the width of the road be equal on both sides from its centerline without any curves.	Technically, the width of the road is always equal both sides from its centerline including those on the curves and will not affect the private land of villagers.
3	How long will the sewerage lines construction take? Please leave pathway for access into house.	For the duration of the construction, the contractor will try to complete it as soon as possible once the AHs are compensated and the COI is vacated by the AHs. Any damage to the pathway or entrance to the house during construction will be restored by the contractor. The contractor will provide temporary access to houses if the AHs are denied access during construction.

VII. Grievance Redress Mechanism

25. The Provincial Grievance Redress Committee (PGRC) established in Serei Saophoan Province for the Subproject in the approved March 2021 DRP will apply for the change in alignment of four (4) sewerage lines. The composition of the PGRC for the grievance redress mechanism (GRM) remains unchanged and is provided in **Annex 4** of this Resettlement Report.

VIII. Eligibility, Entitlements, Assistance and Benefits

26. Eligibility to receive compensation and resettlement assistance was determined regarding the COD, which was issued on the completion of the consultations prior to the DMS. The COD was set as **7 May 2025**. All APs identified within COI of the change in alignment of the four (4) sewerage lines will be entitled for compensation and resettlement assistance. The information about the COD was documented and disseminated by the Ministry of Public Works and Transport (MPWT) and Provincial Resettlement Committee along the three roads and

through posting on commune and provincial notice boards and at pagodas. Those who encroach into the COI after the COD regardless of their vulnerability status will not be entitled to compensation or any other assistance unless there was a further change in subproject scope or design leading to a change in COI alignment. Likewise, any changes or improvements to existing assets after the COD will neither be included nor compensated. APs who occupy the COI area after the COD will not be eligible to any compensation or assistance. The entitlements for the change in alignment of four (4) sewerage lines have been defined in accordance with the various impacts identified based on the results of DMS/SES. Hence all APs are entitled to various types of entitlements and resettlement assistance for their affected assets based on the replacement cost study (RCS) conducted in May-June 2025. The entitlements for all 74 AHs impacted are in **Table 6** below.

Table 6 : Entitlement Matrix

No.	Type of Loss	Application	Category of AH	Entitlements	Clarification / Implementation
1. Loss of Structures					
1a	Loss of, or damage to secondary structures and other assets **670.24m^2 of 65 AHs and** **2.00m of 1 AH**	Structures	Owners of the structure whether or not land is owned; with or without building permit.	• Cash compensation at replacement cost for the affected assets. • AH can retain the materials from demolition of their structures at no cost. • In case of loss of only part of the houses / buildings / structure and the remaining portion is not livable or useable compensation will be paid for the structure at its entirety at same replacement cost. • If AH belongs to any of the vulnerable groups, see Item 4. below. • The calculation of rates will be based on the actual affected area and not the useable area. • For AH relocated, transport allowance to cover costs during relocation.	Compensation will be provided in the form of cash without deductions for depreciation or salvageable materials. If the head of household is married, compensation will be paid at the presence of both husband and wife. Fixed Lump Sum allowance per AH based on average cost of transportation to new relocation place located at the distance of: 1. Less than 5 km from the affected plot; or 2. More than 5 km from the affected plot.
2. Loss of Trees					
2a	Loss of Fruit and Timber Trees) **16 Fruit Trees of 15 AHs and** **6 Non-Fruit Trees of 5 AHs**	Trees	All AHs who are legal owner of trees, regardless of land ownership/tenure status	• For fruit trees, replacement cost of loss based on the following formula: {(Quantity Harvested per Year X (Market Price) X Number of years it will bear fruit)] + cost of seedlings. • Timber trees that have a growth period of more than 5 years are classified as follows: - Sapling trees under 1 year: not compensated as it can be	RCS will determine the amounts. Advance notice to harvest at least three months before commencement of civil work, and APs will remove their trees from the subproject areas within one month after receiving compensation.

No.	Type of Loss	Application	Category of AH	Entitlements	Clarification / Implementation
				replanted. Cost of seedling provided; - Young tree (1 to 3 years): valued at one-third of its full price as it can be replanted plus cost of seedlings; - Young tree (more than 3 to 4 years): valued at two-thirds of its full price plus cost of seedlings - Mature tree (more than 5 years): valued at full price plus cost of seedlings	
3. Loss of Livelihood and Income Restoration					
3a	Loss of Business (No AH)	Income loss	All AHs who are engaged in business and have to relocate.	• For businesses which need to be relocated to a new site, an amount equal to loss of projected net income for two months. • For businesses relocated on-site (move back or same area), an amount equal to projected net income for one month. • For operating of illegal nature of businesses like gambling, prostitution, drugs and similar types, no compensation is paid.	RCS will verify and determine the amounts based on supporting documents.
3b	Loss of Income during Transition Period - Subsistence Allowance (No AH)	Income loss	AHs who lose income during the transition period regardless of ownership status.	• Lump sum amount equivalent to 3 months of income based on the official monthly poverty rate established by the Government. **Monthly Poverty Rate X Number of Members in AH X 3** • In case AH is classified as poor and vulnerable group, the above lump sum amount is doubled.	Poor and Vulnerable AHs will be identified during the DMS (that includes SES and IOL). If the actual income loss is higher than the amount calculated by the formula Monthly Poverty Rate X Number of Members in AH X 3, the AP will be compensated based on actual loss.

No.	Type of Loss	Application	Category of AH	Entitlements	Clarification / Implementation
4. Temporarily affected properties during construction					
4a	Temporarily affected land and non-land assets during construction	Temporary impact on structures	Owner of temporarily affected land and non-land assets, regardless of land ownership status	• Contractor will pay rent for any land/structure required for construction workspace outside the ROW. • For assets within the Corridor of Impact (COI): no compensation for temporarily affected land/non-land assets, but construction contractor will be responsible to restore/rebuild all temporary impacted assets such as pavement, driveways, signposts and light weight extended eaves.	As part of the civil works contract, all pavements/walkways/access roads/driveways to properties adjacent to the road will be repaired or replaced including culverts and other facilities, to a condition equal or better than the present.
4b	Temporary impact to productive assets during construction (e.g. shops and stalls, and fields and associated infrastructure including bund walls, drains, channels, etc.)	Temporary impact on livelihoods	Owners of productive assets, regardless of land ownership status	• One-time cash assistance of $100/AH for dismantling, reassembling of stalls and temporary loss of income during relocating back and forth to the temporary market site. • For income loss due to business disruption, see 3a and 3b. • Stalls along construction area which need to be temporarily moved will be relocated near-by to continue their business uninterrupted.	AHs will be notified at least 3 months in advance of the actual date that the land/non-land asset will be temporarily used or affected by the project. The contractor will be required by contract and EMP to cover these costs. Construction and maintenance will be carried out so as to minimize damage. The disruption period will be minimized as much as possible.
5. Unanticipated Impact					

No.	Type of Loss	Application	Category of AH	Entitlements	Clarification / Implementation
5a	Unanticipated involuntary resettlement Impacts		Eligible displaced persons	• New displaced persons that will be identified (i.e., those who will be included among the adversely affected because of changes in subproject design or alignment prior to or even during construction works) are entitled to the same entitlements as those of the other displaced persons.	GDR shall ensure the conduct of a social assessment and update or formulate a new RP or a DRP addendum depending on the extent of the impact changes. Unanticipated impacts will be documented and mitigated based on the principles provided in this DRP.

Source: Entitlement Matrix approved in Serei Soaphoan Subproject's DRP

IX. Estimated Resettlement Budget

27. The cost for all compensation and resettlement assistance for the realignment of four (4) sewerage lines will be financed from the national budget, and no financing will be required from the ADB loan and grant. The resettlement budget is estimated at **$36,108.86**. This includes: (i) $**20,261.77** as cost of compensation of secondary structures and trees; (ii) **$5,000.00** for administrative costs; (iv) **$1,013.09** of contingency amount. **Table 7** summarizes the estimated resettlement budget.

Table 7: Estimated Resettlement Budget

No.	Description of Affected Assets and Allowances	Unit	Quantity	Rate ($)	Total ($)
A	**Assets**				
1	Secondary Structures	m^2/m	Various	Various	19,309.77
2	Fruit Trees	Nos.	16	Various	697.00
3	Non-Fruit Trees	Nos.	6	Various	255.00
	Total A				**20,261.77**
1	Replacement Cost Study (lump sum)				9,834.00
2	Administration Cost (lump sum)				5,000.00
3	Contingency (5% of A)				1,013.09
	Total Estimated Resettlement Cost				**36,108.86**

Source: RD3 Estimates from the RCS Report

X. Institutional Arrangements

28. The institutional arrangements in the approved DRP for the Subproject under the TS2 Project will apply for the change in alignment of the four (4) sewerage lines.

XI. Monitoring and Reporting

29. The monitoring and reporting of the implementation of the approved DRP for the Subproject under the TS2 Project will apply for the change in alignment of four (4) sewerage lines. The internal monitoring indicators in the approved DRP will also apply for the change in alignment of four (4) sewerage lines.

XII. Implementation Schedules

30. All resettlement activities will be coordinated with the civil works schedule of the realignment of the four (4) sewerage lines. The Resettlement Report will be implemented after its approved by the IRC, cleared by ADB and the budget approval by the MEF. Civil works cannot commence until compensation is paid in full for all the losses, including loss of income, if any, where these impacts are identified, according to the provisions of this Resettlement Report. It is expected that the compensation payments will be completed within a period of two months and land handed over after the AHs have vacated the land after receiving compensation payments. Thereafter, MPWT will issue a notice of possession of the specific sites to the contractor for construction. However, construction can proceed on sections free from encumbrance based on agreement between the MPWT and ADB. The tentative implementation schedule for resettlement actions is summarized in **Table 8**.

Table 8: Tentative Resettlement Implementation Schedule

Activities	Schedule
Resettlement Report preparation	July-August 2025
ADB comments on the report addressed	August and September 2025

Approval of the Report by IRC and clearance by ADB	September 2025
Disclosure of the Report on ADB and MPWT Websites	September 2025
Approval of Budget by IRC and MEF	October 2025
Contract Offer and Contract Signing with AHs	October 2025
Disbursement of Compensation to the AHs	November-December 2025
Vacation of Land by AHs (one month after compensation payment)	January 2026
Handover of Land to MPWT by GDR (with a copy to ADB)	February 2026
ADB's No Objection to Civil Works	February 2026
Submission of Semiannual Social Safeguards Monitoring Reports (to ADB)[a]	15th Jan 2026, 15th July 2026, 15th Jan 2027

[a] The report submission will cease after the completion of the civil works.
Source: RD3 of GDR

Annex 1: Breakdown of Affected Assets

Secondary Structures

	Type of affected Assets	Unit	Quantity	AHs
1	10cm brick fence, unplastered	m^2	3.68	1
2	10cm brick fence, plastered	m^2	0.66	1
3	10cm brick fence, plastered, with steel bars on top	m^2	3.90	1
4	20cm brick fence, plastered, with steel bars on top	m^2	12.54	1
5	Signage (Zinc Sheet, Sunshine Quick, Money Transfer)	m^2	59.78	4
6	Signage (Aluminum Composite)	m^2	113.73	10
7	ABA Sign	m^2	5.04	1
8	Limei Printing Signage	m^2	9.60	1
9	Awning/Eaves	m^2	461.31	45
TOTAL			**670.24**	**65**
1	Concrete post (0.2*0.2m)	m	2.00	1
TOTAL			**2.00**	**1**

Trees

	Fruit Trees	No.	AHs
1	Mango	1	1
2	Longan	5	5
3	Lychee	1	1
4	Milk fruit	1	1
5	Jack fruit	1	1
6	Avocado	1	1
7	Dragon eye fruit	1	1
8	Papaya	2	1
9	Pomegranate	1	1
10	Jambolan plum	1	1
11	Bilimbi	1	1
TOTAL		**16**	**15**

	Non-Fruit Trees	No.	AHs
1	Guiana chestnut	1	1
2	Noni	1	1
3	Leab Tree/Schefflera	2	1
4	Ficus benghalensis	1	1
5	Cassia fistula	1	1
TOTAL		**6**	**5**

Note* AHs may have more than 1 type of tree

Annex 2: Combined Minutes of Public Consultation Meetings Prior to the Detailed Measurement Survey

Public Consultation Meeting with the Affected Households for the Change in Alignment of Four (4) Sewerage Lines under the Wastewater and Drainage Subproject – Serei Saophoan

The IRC-WG assisted by the PRSC-WG, and local authorities conducted two (2) PCMs Affected Households (AHs) of Sangkat Kompong Svay and Sangkat Preah Ponlea, Serei Soaphorn on 7 May 2025 attended by 20 participants (3 Female, 17 Male) summarized in the table below.

Summary of the Dates/Venues and Number of Participants by Gender at the PCMs

Date/Time	Venue	No. of Participants
07 May 25/08:00	Kompong Svay Primary school	10 (1 Female, 9 Male)
07 May 25/14:30	Samathipal pagoda	10 (2 Female, 8 Male)
Total		**20 (3 Female, 17 Male)**

The PCMs were led by the Deputy Team Leader (DTL) of the IRC-WG. DTL informed the participants that in March 2021 the team conducted the Detailed Measurement Survey (DMS) for the entire subproject on affected assets and have already provided compensation. However, the purpose this PCM is to discuss the resettlement impacts and benefits of the change in alignment of four (4) drainage lines on PR56, NR5, and BMC Bank Road, the mitigation measures, the entitlements, eligibility and compensation for lost assets, the cut-off date (COD) and the grievance redress mechanism (GRM) including contact focal persons in the event of complaints and conduct DMS on the affected assets impacted by the four (4) drainage lines. All these topics were included in the updated PIB including the DMS Questionnaire and GRM Guidelines all published in Khmer language which was made available to the participants prior to the commencement of the PCMs and explained in detail during the PCMs. These salient topics were again discussed and explained to individual household heads on a one-on-one basis during house-to-house DMS.

The DTL of the IRC-WG informed the participants that the COD was set as of **7 May 2025**. They were further informed that after this COD, any person who moves into or encroaches on the ROW of the roads to build or expand any kind of structure such as house, shop, fences and/or to plant any kind of trees, crops, will **NOT** be entitled to any compensation or any other assistance, except if changes in the subproject design or additional land take entail a modification of the subproject area. The Commune and Village Chiefs were informed to keep an oversight that no activities take place within the ROW.

The DTL informed the participants that DMS process to be conducted jointly with the AHs and for them to confirm the loss of their assets and the measurements and fully understand the basis on which the compensation will be paid for the loss of their assets and other entitlements. The participants were informed that the GRM was established at all levels and operational to address their issues, concerns and grievances arising from the Subproject. During house-to-house DMS, the PIB and DMS Questionnaire was read out and explained to individual AHs.

The participants engaged in the discussions during the PCMs welcomed the change of the alignment of the four drainage lines noting that there will be no damage to the road pavements, water supply pipes and electricity cables and shared their views on key issues/questions which are summarized in the Table below:

Table: Summary of Key Issues/Questions and Responses

No.	Ky Issues/Questions	Responses
1	I have impact on some structures, trees. Will there be any compensation for that?	If the impacts to your assets are withing the corridor impact and they were there before the cut-off date, they will compensated at full replacement cost.
2	I would like to suggest that the width of the road be equal on both sides from its centerline without any curves..	Technically, the width of the road is always equal from its centerline including those on the curves and will not affect the private land of villagers.
3	How long will the drainage construction take? Please leave pathway for access into house.	For the duration of the construction, the contractor will try to complete as soon as possible once the AHs are compensated and the corridor of impact is vacated by the AHs. Any damages to pathway or entrance to house if damaged during construction will be restored by the contractor.. The contractor will provide temporary access to houses if the AHs are denied access during construction.

After the question-and-answer session, the DTL of the IRC-WG informed the participants on the schedule for the DMS and requested all the AHs to be present for consultation and joint measurement of their affected assets.

Representative From GDR | Minute taker

Eth Vannak | Chneang Kosal

1. **Conductors of Consultation Meeting at Kompong Svay Primary school, Date: 07 May 2025, Time: 8:00am**

No.	Name	Sex	Institution	Position
1	Son Khim	M	Kompong Svay	Village chief
2	Lok Ramon	M	Kompong Svay	Assistant to village chief
3	Khem Leabraksmey	M	Serei Soaphoan city	PP4
4	Chneang Kosal	M	Banteay Meanchey Provincial Hall	Officer
5	Chhun Buntha	M	Banteay Meanchey Provincial Hall	Director of Provincial Hall
6	Sou Sonith	M	Department of Provincial Public Works and Transport	PIU
7	Phong Sath	M	Tarang Bal	Village chief

Kompong Svay commune, Banteay Meanchey province

No.	Name	Sex	Position
1	Tith Oun	M	AH
2	Horn Vathana	F	AH
3	Yim Veasna	M	AH
4	Yam Nan	M	AH
5	Seak Meng	M	AH
6	Vannak Vanseth	M	AH
7	Keath Tlai Tla	M	AH
8	Mon Sopheaktra	M	AH
9	Chao Hout	M	AH
10	Loa Ou	M	AH

2. **Conductors of Consultation Meeting at Samathipal pagoda, Date: 07 May 2025, Time: 2:30pm**

No.	Name	Sex	Institution	Position
1	Eth Vannak	M	GDR, MEF	IRC-WG
2	Khem Pichraksmey	M	Serie Saophoan	PIU
3	Young Vanthan	M	Village 4	Village chief
4	Hong Vansak	M	Preah Ponlea	Sangkat Council
5	Nen Saneun	M	PRSC-WG	PRSC-WG
6	Chneang Kosal	M	Provincial Hall	Officer

Preah Ponlea commune, Banteay Meanchey province

No.	Name	Sex	Position
1	Cheng Khen	F	AH
2	Lem Kemsan	M	AH
3	Eng Sen	M	AH
4	Cheng Py	M	AH
5	Bouy Meng	M	AH
6	Met Sivanon	M	AH
7	Lang Kemheak	F	AH
8	Ren Bunthov	M	AH
9	Vat Chantha	M	AH
10	Leb Bunthong	M	AH

Attendant List in Khmer

Date: 07 May 2025 at 8am at Kompong Svay Primary school

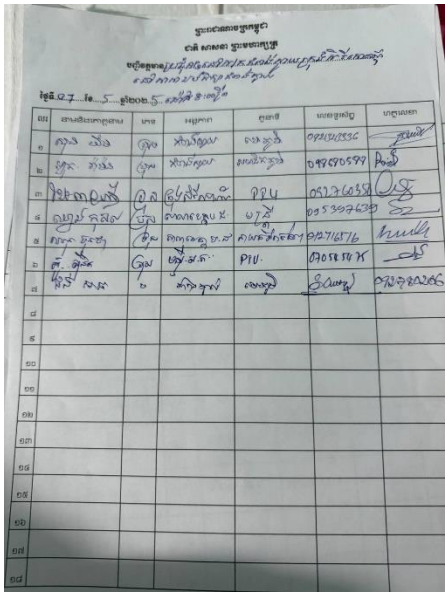

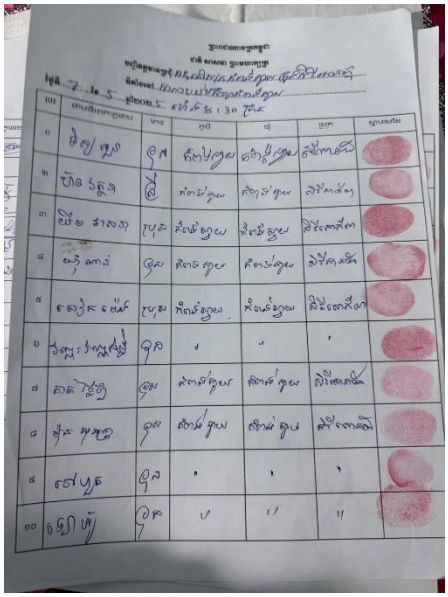

Date: 07 May 2025 at 2:30pm at Samathipal pagoda

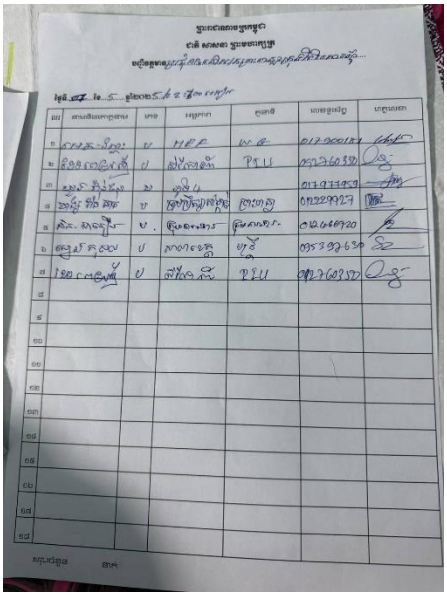

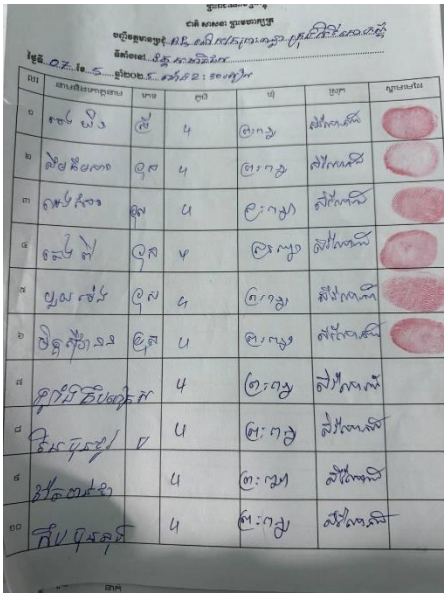

Photographs taken during Public Consultation Meeting
Date: 7 May 2025 at 8:00am and 2:30pm

Annex 3: Updated Public Information Brochure (PIB) on Change in Alignment of Four (4) Sewerage Lines under Wastewater and Drainage Subproject - Serei Saophoan

PUBLIC INFORMATION BROCHURE

Second Urban Environmental Management in the Tonle Sap Basin Project

Wastewater and Drainage System Subproject – Change in Alignment of Four (4) Sewerage Lines in Serei Saophoan

The purpose of this PIB is to provide **Second Urban Environmental Management in the Tonle Sap Basin Project (TS2)** related information to persons and households at the subproject sites, who may be physically (relocation, loss of residential land or loss of shelter) or economically (loss of land, assets, access to assets, income sources or means of livelihood) affected by land acquisition and involuntary resettlement. This Updated PIB is for the change in alignment of four (4) sewerage lines under the Wastewater and Drainage System Subproject in Serei Saophoan.

A. PROJECT BACKGROUND

1. What is the Second Urban Environmental Management in the Tonle Sap Basin Project (TS2)?

The Asian Development Bank (ADB) is supporting the Royal Government of Cambodia to improve the urban services for enhancing regional economic connectivity in participating towns of Stueng Saen, Serei Saophoan and Battambang. This will be achieved through investments in basic urban infrastructure such as drainage, sanitation and solid waste management. The Royal Government of Cambodia has obtained a loan and grant from the ADB to implement the Project. The Project loan effectiveness is from 14 December 2018 to 30 June 2024. The Ministry of Public Works and Transport will be the Executing Agency for the TS2.

2. What are TS2 Project Outputs?

The three outputs of the TS2 are (i) Urban infrastructure improved, (ii) Institutional effectiveness improved and (iii) Policy and planning environment improved.

3. What is the TS2 Project and its components?

For each of the towns the Project will develop lagoon-based wastewater treatment plant (WWTP), sewerage network and a controlled landfill with all associated infrastructure and equipment. The Project will also develop for Stueng Saen and Serei Saophoan separated drainage network from the sewerage network. The maps attached illustrate the overall Project sites with location of WWTP, pump station, collection system, storm water drainage and solid waste management site.

The Wastewater and Drainage in Serei Saophoan Subproject will construct 3,500.00m^3 per day capacity WWTP on 24.00ha of private land and develop a separate system for service area North-West of the Serei Saophoan River with 110.00km of pipeline and 4 pump stations. The Project will upgrade the access road to WWTP for a length of 3.00km. The stormwater drainage network will be 6.90km long.

The Serei Saophoan Solid Waste Management Subproject will develop a controlled landfill (10.00ha) with a volume capacity of 152,260 cubic meters with associated purchase of landfill equipment in Kampong Svay, Serei Saophoan. Access road upgrade to the landfill will be constructed with a length of 1.60km.

The change in alignment of four (4) sewerage lines 2.60km will be shifted from the road pavement to roadside footpath to avoid damage to the existing road pavement and the underground utilities (water supply pipes and electricity cables). The rehabilitation works will be completed on the roadside footpaths where there are no underground utilities (**Figure 1**). The change in alignment of four (4) sewerage lines is fully located within the right-of-way (ROW) of the road as well as inside the current corridor of impact (COI) defined in the detailed resettlement plan (DRP) of the **Wastewater and Drainage System Subproject in Serei Saophoan**.

Figure 1: Realignment Sewerage Lines at PR56A, NR5, and BMC Bank Road

4. What are the scope of land acquisition and resettlement and likely impacts?

There will be impacts on non-land assets by the change in alignment of four (4) sewerage lines. After the detailed engineering design (DED), the Project Management Unit (PMU) and design consultants will place demarcation pegs on the ground before the detailed measurement survey starts.

5. What is the ROW and COI of the subproject?

The ROW means state land along the road with fixed distances from the centerline of existing roads for future development. The land in the ROW is state or government-owned land. The COI is the area where rehabilitation works will be carried out. The affected people in the COI, after the payment of compensation, will need to move out to allow the civil works to be carried out.

6. What is the cut-off date for eligibility?

The cut-off date (COD) is the date established by Royal Government of Cambodia that establishes the eligibility of the affected households/affected persons (AH/AP) for receiving compensation and resettlement assistance under the subprojects. Only those AHs who are in the COI or lose their assets before the COD will be eligible for compensation and assistance. Any person who occupies land or expands structures or improvements to his house after the COD will be ineligible for receiving compensation. Fixed assets such as built structures (new or expansion of existing structures), crops, fruit trees, and other similar assets after the COD will not be compensated.

The COD for this change in alignment of four (4) sewerage lines is the date of the public consultation with the APs at the start of the detailed measurement survey (DMS). The COD is **7 May 2025**.

7. What is the detailed measurement survey (DMS) and when will it be conducted?

The DMS is a detailed survey and measurement of all affected assets including land, houses and structures, shops, crops, and trees of all the AHs. It will be conducted for each AH to record and agree on all the AH's losses of assets. The survey will also collect information and data on socioeconomic status, sources of

livelihood, income, education levels of AH heads and APs, vulnerability etc. This is carried out in the presence of the AH and witnessed by a commune or village official. The DMS will be the basis for the calculation of the compensation package for each AH. The DMS will be conducted after the DED is completed. The affected people and the local authorities will be informed in advance of this work.

8. What will the compensation and entitlements be?

Households/People affected by the Project are entitled to receive compensation for affected assets as per the entitlement matrix (**Appendix 1 to this PIB**) under the following key compensation principles:

- Provisions of fair and just compensation in advance.
- Full compensation paid before expropriation or clearance.
- Compensation is based on the replacement costs of lost assets at market prices that will be determined by an independent consultant through a replacement cost study (RCS) without any deductions made for depreciation, salvage materials and transaction costs**.**

(a) Will I be compensated for lost land?

The ROW is state land and AHs who occupy land on the ROW will not be compensated for the land. However, they will be compensated for any loss resulting from using the land like, for example, for structures, operating a stall or planting crops or fruit trees.

In case, after the completion of DED, it becomes necessary to acquire private land for new alignments on which AH has a legal right that falls **outside of the ROW**, then compensation will be paid at replacement cost of the land to be acquired.

(b) Will I be compensated for the affected house and structures that I own?

Yes. Private houses and structures that are affected by the Project will be compensated at replacement costs. No amount from the replacement cost will be deducted for depreciation, salvage materials or transactions costs. Structures include fences, wells, latrines, concrete pavements, gates and other similar structures for which the AH can show ownership. If the house or structure is partially affected, then the compensation will be paid for the affected portion unless it can be shown that the remaining portion can no longer be useful after the removal of the affected portion. In such cases, compensation will be paid for the whole structure.

(c) Will I be compensated for my crops and trees?

Yes. For annual crops that are produced on an annual seasonal basis like rice will be compensated for **Net Annual Income for One Year**. In addition, sufficient notice will be provided to the AHs so that they can harvest the crops in time. No compensation is paid for crops in this case. For standing crops that are ripening but cannot be harvested by the time the land is required, the AHs will be compensated for the lost crop on replacement cost basis.

For perennial crops (trees that produce fruits for multiple years like mango tree), the AHs will be compensated for the loss of fruit which will consider the loss of potential income and the time required to re-establish the perennial trees.

(d) If I have to relocate my house or shop, is there any relocation assistance?

Yes. All effort has been made during the DED stage of the Project to avoid any physical displacement of AHs. For any physical relocation of houses or similar residential structures from the COI will be provided transition allowance, relocation assistance and an option to relocate at relocation site. There may be some relocation stalls where they will be required to self-relocate or move back outside of the ROW. Apart from the compensation for the structures at replacement cost, transitional allowances will be paid as follows: (i) fixed lump sum transportation allowance for moving the assets; and (ii) loss of business income in case of stalls carrying out business. In the case, the AHs are classified as poor and vulnerable, the allowances in (ii) above will be **doubled**.

(e) In case my livelihood is affected, how will I be compensated?

The DMS will take note of the livelihoods of the AHs and whether there is any impact on them. Under the Project, for AHs whose livelihood is impacted they will be provided with income loss or restoration support:

(i) Loss of income during the transitional period where physical relocation is required. This will cover loss of income during the period of self-relocation.
(ii) When main source of livelihood source is **permanently** lost, a livelihood restoration/support program will be provided to assist the AHs/APs to rebuild/restore their livelihood.

In case the AHs are classified as poor and vulnerable, these cash grants under the chosen livelihood restoration/support allowances will be **doubled**. In addition, the Project will seek to provide work opportunities in the Project during the construction period.

9. How will the replacement cost be decided, and compensation calculated?

The payment of compensation will be made based on the market value or replacement cost of the lost assets without a deduction being made for salvaged materials, depreciation, or transaction costs. A RCS will be carried out by a locally qualified independent consultant with the necessary qualifications and experience in asset valuation to determine the prevailing market rates. This will be done at the time of the DMS. The RCS consultant will carry out a detailed analysis of the market rates for all types of assets prevailing in the Project or subproject area and prepare the unit rates for each category of lost assets. These will be used to calculate the replacement value and will be used to prepare the resettlement budget. The General Department of Resettlement (GDR) of the Ministry and Economy and Finance will select the RCS consultant before the commencement of the DMS.

10. Do I have right to complain about disagreements, compensation issues, resettlement or other related issues, if yes how?

Yes, you have the right to lodge your complaint to the Grievance Redress Committee (GRC) if you are unclear or unhappy with resettlement activities. The members of GRC provided in **Appendix 2 of this PIB** ae always ready to assist you. The attempt to redress your grievance will commence at village level through the Village Chief. However, you can lodge your verbal complaint to any member of the GRC (i.e. at village, commune or resettlement working group). The GRC will record and document your complaint and advise you of the resolution.

The GRM for the subproject was established 17 March 2020 and will apply the change in alignment for the four (4) sewerage lines. The GRM was set up to deal with complaints relating to unjust compensation, inadequacy of entitlements, inaccuracies in detailed measurements or errors in computation of the compensation payments, among others. The GDR through Inter-Ministerial Resettlement Committee (IRC) will facilitate the establishment of a Provincial Grievance Redress Committee (PGRC). The PGRC will be established by the Provincial Governor in consultation with the IRC. The composition of the PGRC and contact information of focal GRC Person, Complaint Form, Registration Form and Sample Letter on Resolution are in **Appendices 2-5**.

A GRC for Banteay Meanchey province was set up at the provincial level with the process starting from the commune office. The GRC includes only the relevant Commune or Village chief. The use of local organizations is allowed to assist affected household heads (AHHs) in filing complaints, especially by those who are unable file a written complaint, as well as indigenous peoples with language problems. Assigned commune officials must make every effort to address the issues of AHHs at the commune level through appropriate community consultations. All meetings will be recorded in each grievance process and a copy will be provided to the AHH. Procedures for resolving grievances are set out in three (3) steps below.

However, prior to Step 1, the AH may informally seek the assistance of the Commune Chief or community elder to discuss and find an amicable solution to his/her complaint or grievance with the leader of the Provincial Resettlement Sub-committee-Working Group (PRSC-WG). This is done verbally and informally, and no recording is required, and moreover its aim is to resolve the matter to avoid lodging formal written complaints. Any activities in resolving grievances at this stage (commune-level) will be recorded by the commune authorities and reported in the quarterly internal monitoring reports. If this problem solving does

not resolve the complaint to the satisfaction of the AH, s/he can seek the formal route for lodging the grievance under the 3 steps below.

Step 1: The aggrieved AH can lodge a written complaint to the Head of the District Office. The AH can bring a community elder or representative to mediate in the matter at the district level. The Inter-ministerial Resettlement Committee Working Group (IRC-WG) will appraise the Head of the District Office for the matter. The conciliation meeting must be held, and a decision taken within 15 working days after the date of registration of the complaint by the District Office. If the complaint is resolved the satisfaction of the AH, the IRC-WG will inform GDR's Department of Internal Monitoring and Data Management (DIMDM), which will review and seek the approval of the Director General of GDR for appropriate remedial action. The AH will be informed in writing by the GDR of the decision and the remedial action that will be taken within **15 working days** from the receipt of the letter from the District Office. If the complaint is rejected at this stage, the District Office will inform the AH in writing and if the AH is not satisfied with the result, s/he can proceed to the next step and lodge a written complaint to the GDR for resolution.

Step 2: The GDR, through its DIMDM will carry out a holistic review of the complaint and submit a report on its findings with the relevant recommendations, if any, to the Director General of GDR for a decision. It may also conduct a field visit to meet the aggrieved AH and the IRC-WG to gather the relevant details. The final report must be completed within **30 working days** from the date of receipt of the complaint and submitted to the Director General of GDR for a final decision within **5 working days** of receipt of the final report. If the subject matter requires a policy level intervention, it will be referred to the IRC for a decision in which case **10 more working days** will be added to the deadline for final decision.

Step 3: The AH will submit a written complaint with the PGRC through the Provincial Governor's Office. The AH or representative will be given an opportunity to present its case during the meeting and the PGRC may consider any compelling and special circumstances of the AH when reaching a decision. The GDR will send a representative, as a non-voting member, to provide an explanation for the rejection of the complaint at the second step by the GDR. The decision of the PGRC must be reached on a consensus basis and will be final and binding except when the matter relates to any policy of the Government. Decisions on Government policy matters on land acquisition and involuntary resettlement is decided by the IRC. The PGRC will have **40 working days** from the date of receipt of the complaint to reach a final decision. The decision of the PGRC will be sent to the IRC through the GDR for endorsement before taking any remedial action.

The handling of the complaint ends at the Third Step. There are no fees or charges levied on the AH for the lodgment and processing of the complaints under the First, Second and Third Steps. However, as provided for in the Expropriation Law, the aggrieved AH can file a suit at the Provincial/Municipal Courts, as applicable, to seek a resolution. Such actions will be at the cost of the AH. At this stage, there is no involvement of the GDR, PRSC or IRC-WG unless there is a judicial order from the competent courts.

11. Who do I contact in case I need clarifications or have a problem/complaint?

The key contact persons and their mobile numbers are provided in the box below who can provide you with clarifications on the Project related technical issues. At this point in time, the eligibility, loss of assets, the DMS and the compensation packages have not been decided and hence any complaints relating to them will not be entertained.

The Provincial Governor has already established the Grievance Redress Mechanism (GRM) facilitated by the Inter-Ministerial Resettlement Committee of the Ministry of Economy and Finance under which GRCs at Commune, District, GDR and Provincial levels. These Committees were made operational before the commencement of the DMS. Any complaints or grievances on any aspects relating to incorrect measurements or a compensation package will need to be sent to these Committees for resolution.

Contacts Persons Related to Land Acquisition and Resettlement

Mr. Eth Vannak, Deputy Chief, General Department of Resettlement, Ministry of Economy and Finance, Phnom Penh.
Tel: 017 900 181
Mr. Vong Rada, Project Manager, Project Management Unit, Ministry of Public Works and Transport, Phnom Penh
Tel: 012 451 545

Appendix 1

ENTITLEMENT MATRIX

No.	Type of Loss	Application	Category of AH	Entitlements	Clarification / Implementation
1. Loss of Structures					
1a	Loss of, or damage to secondary structures and other assets	Structures	Owners of the structure whether or not land is owned; with or without building permit.	• Cash compensation at replacement cost for the affected assets. • AH can retain the materials from demolition of their structures at no cost. • In case of loss of only part of the houses / buildings / structure and the remaining portion is not livable or useable compensation will be paid for the structure at its entirety at same replacement cost. • If AH belongs to any of the vulnerable groups, see Item 4. below. • The calculation of rates will be based on the actual affected area and not the useable area. • For AH relocated, transport allowance to cover costs during relocation.	Compensation will be provided in the form of cash without deductions for depreciation or salvageable materials. If the head of household is married, compensation will be paid at the presence of both husband and wife. Fixed Lump Sum allowance per AH based on average cost of transportation to new relocation place located at the distance of: 1. Less than 5 km from the affected plot; or 2. More than 5 km from the affected plot.
2. Loss of Trees					
2a	Loss of Fruit and Timber Trees)	Trees	All AHs who are legal owner of trees, regardless of land ownership/tenure status	• For fruit trees, replacement cost of loss based on the following formula: {(Quantity Harvested per Year X (Market Price) X Number of years it will bear fruit)] + cost of seedlings.	RCS will determine the amounts. Advance notice to harvest at least three months before commencement of civil work, and APs will remove their trees from the subproject

No.	Type of Loss	Application	Category of AH	Entitlements	Clarification / Implementation
				• Timber trees that have a growth period of more than 5 years are classified as follows: - Sapling trees under 1 year: not compensated as it can be replanted. Cost of seedling provided; - Young tree (1 to 3 years): valued at one-third of its full price as it can be replanted plus cost of seedlings; - Young tree (more than 3 to 4 years): valued at two-thirds of its full price plus cost of seedlings - Mature tree (more than 5 years): valued at full price plus cost of seedlings	areas within one month after receiving compensation.
3. Loss of Livelihood and Income Restoration					
3a	Loss of Business	Income loss	All AHs who are engaged in business and have to relocate.	• For businesses which need to be relocated to a new site, an amount equal to loss of projected net income for two months. • For businesses relocated on-site (move back or same area), an amount equal to projected net income for one month. • For operating of illegal nature of businesses like gambling, prostitution, drugs and similar types, no compensation is paid.	RCS will verify and determine the amounts based on supporting documents.
3b	Loss of Income during Transition Period - Subsistence Allowance	Income loss	AHs who lose income during the transition period regardless of ownership status.	• Lump sum amount equivalent to 3 months of income based on the official monthly poverty rate established by the Government. **Monthly Poverty Rate X Number of Members in AH X 3** • In case AH is classified as poor and vulnerable group, the above lump	Poor and Vulnerable AHs will be identified during the DMS (that includes SES and IOL). If the actual income loss is higher than the amount calculated by the formula Monthly Poverty Rate X Number of Members in AH X 3, the AP will be

No.	Type of Loss	Application	Category of AH	Entitlements	Clarification / Implementation
				sum amount is doubled.	compensated based on actual loss.
3c	Permanent Loss of Livelihood Source	Income Restoration	AHs who lose their source of livelihood permanently regardless of ownership status	• Entitled to participate in any one of **the Livelihood Restoration/Support Programs:** • **Land Based Livelihood Restoration** for AHs engaged in land-based livelihood. (i) facilitate access to other land-based sources of income, if affordable productive land is available, like vegetable gardening, fruit tree, livestock and other similar land-based income generating sources; (ii) provision of training in farming or livestock; and (iii) lump sum cash grant of US$ 200 to re-start land-based livelihood. • In case of unavailability of suitable land, the AHs can opt for either **employment or business-based** livelihood program. • **Employment Based Livelihood Restoration** for AHs who lose employment permanently. (i) provision of employment skills training; and (ii) lump sum cash grant equivalent to **3 months** of income based on official poverty rate to supplement income support during the training period. • **Business Based Livelihood Restoration** for AHs who lose businesses permanently or AHs	The program will be based on the choice of the AP. Land Based for AHs who lose land-based livelihood. Employment Based for AHs who lose employment -based livelihood. **3 months of income based on poverty rate= (Monthly Poverty Rate X Number of Members in AH X 3).** Business Based for AHs who lose business-based livelihood. This can also be available to AHs who do not want to continue with land or employment-based livelihood at their own choice. Business Based for AHs who lose business-based livelihood. This can also be available to AHs who do not want to continue with land or

No.	Type of Loss	Application	Category of AH	Entitlements	Clarification / Implementation
				who opt for this as an alternative livelihood source. (i) provision of business skills; and (ii) a lump sum cash grant of US$ 200 to assist in starting micro or home-based business. **OR** • $200 Cash Grant plus $300 cash assistance IRP instead of training	employment-based livelihood at their own choice.
				• For **Poor and Vulnerable AHs.** In addition to skills training, (i) above lump sum cash grant will be **doubled**; and (ii) priority in any **employment opportunity** under the project.	Classification will be carried out during the DMS and in accordance with the established criteria and definition of Vulnerable Group in TS2 RF.
3d	Special Assistance		Poor and Vulnerable AHs	• **3** months of income based on poverty rate established by RGC. (Monthly Poverty Rate X Number of Members in AH X 3)	
4. Temporarily affected properties during construction					
4a	Temporarily affected land and non-land assets during construction	Temporary impact on structures	Owner of temporarily affected land and non- land assets, regardless of land ownership status	• Contractor will pay rent for any land/structure required for construction workspace outside the ROW. • For assets within the Corridor of Impact (COI): no compensation for temporarily affected land/non-land assets, but construction contractor will be responsible to restore/rebuild all temporary impacted assets such as pavement, driveways, signposts and light weight extended eaves.	As part of the civil works contract, all pavements/walkways/access roads/driveways to properties adjacent to the road will be repaired or replaced including culverts and other facilities, to a condition equal or better than the present. AHs will be notified at least 3 months in advance of the actual date that the land/non-land asset will be temporarily used or affected by the project.
4b	Temporary impact to productive assets during construction	Temporary impact on livelihoods	Owners of productive assets, regardless of	• One-time cash assistance of $100/AH for dismantling, reassembling of stalls and temporary loss of	

No.	Type of Loss	Application	Category of AH	Entitlements	Clarification / Implementation
	(e.g. shops and stalls, and fields and associated infrastructure including bund walls, drains, channels, etc.)		land ownership status	income during relocating back and forth to the temporary market site. • For income loss due to business disruption, see 3a and 3b. • Stalls along construction area which need to be temporarily moved will be relocated near-by to continue their business uninterrupted.	The contractor will be required by contract and EMP to cover these costs. Construction and maintenance will be carried out so as to minimize damage. The disruption period will be minimized as much as possible.
5. Unanticipated Impact					
5a	Unanticipated involuntary resettlement Impacts		Eligible displaced persons	• New displaced persons that will be identified (i.e., those who will be included among the adversely affected because of changes in subproject design or alignment prior to or even during construction works) are entitled to the same entitlements as those of the other displaced persons.	GDR shall ensure the conduct of a social assessment and update or formulate a new RP or a DRP addendum depending on the extent of the impact changes. Unanticipated impacts will be documented and mitigated based on the principles provided in this DRP.

Appendix 2: Composition of PGRC and Focal GRC Contact Details

Composition of the PGRC of Banteay Meanchey Province

The Table below summarizes the composition of the PGRC of Banteay Meanchey Province.

Composition of Banteay Meanchey Grievance Redress Committee

No.	Name	Position	Position assign
1	Excellency Um Reatrey	Provincial Governor	Chair
2	Mr. Ang Narith	Director of Provincial Department of Land Management, Urban Planning, Construction and Cadastral	Vice Chair
3	Mr. Bueng Kemsing	Director of Provincial Department of Economic and Finance	Member
4	Mr.Norng Vuthy	Administration Director of the BMC province	Member
5	All of the district governor		Member
6	Mr. Chhun Buntha	Director of Inter-Sectoral of Provincial	Member
7	Mr. Ke Sambath	Office Director of Working Law and Public Safety of Provincial	Member
8	All of the representatives of the community water user group		Member

GRM Focal Person Contact Details for Banteay Meanchey

The contact details of each level of GRM are as follows:

Name and Contact of GRM Focal Person at Sangkat Level

No.	Name	Position	Contact
1	Mrs. Chat Sochea	Chief of Ponlea Sangkat	012 596 039

Name and Contact of GRM Focal Person at Municipality Level

No.	Name	Position	Contact
1	Mr. Seng Sophal	Serei Soaphoan Municipality	077 777 638

Name and Contact of GRM Focal Person at GDR Level

No.	Name	Position	Contact
1	Mr. Sok Sopheak	Chief of Bureau, DIMDM	012 923 607
2	Mr. Sorn Kundy	Deputy Chief of Bureau, DIMDM	012 849 790

Name and Contact of GRM Focal Person at Provincial Level

No.	Name	Position	Contact
1	H.E Klok Nouy	Provincial Deputy Governor	016 889 777
2	Mr. Chhun Buntha	Director of Provincial Inter-sectoral	012 716 516

Appendix 3

Individual Complaint Form

Second Integrated Urban Environmental Management in the Tonle Sap Basin Project

Date of Complaint		DMS No.
Name of Complainant		
ID Number Family Book		
Contact (Mobile No)		
Address		
Summary of Complaint		
List of Supporting Documents/Evidence		

Name: **(Head of Household)**

Sign/Thump Print:

Date:

Appendix 4

Register of Complaint

Second Integrated Urban Environmental Management in the Tonle Sap Basin Project

Municipality-District-Kahn: _____

Capital-Province: _____

Date of Receipt of Complaint	Case No.	Name and ID of Complaint		Main Points of Complaint
		Name	ID Number / Family Book	

Appendix 5

Royal Government of Cambodia

Nation Religion King

Letter from Head of District-Khan

Municipality-District-Kahn: _____

Capital-Province: _____

Individual Complaint		
Case No.		
Name of Complainant		
Date of Complaint		
Summary of Complaints *(Same as in Individual Complaint Register Form)*		
GRC Meeting Held		
Date:	Time:	Location:
Participants		
Summary of Discussion		
Date of Field Inspection (if any)		
Result of the Meeting / Decision		
• Reject-No basis as per Entitlement Matrix • Has Merit - Complaint forwarded to Resettlement Department for necessary action		

Name:

Position:

Sign/Thump Print:

Date:

ខិត្តប័ណ្ណព័ត៌មានអំពីគម្រោង
គម្រោងកែលម្អគ្រប់គ្រងបរិស្ថានក្រុងជុំវិញបឹងទន្លេសាប ជំហាន ២ (គម្រោងទន្លេសាប ២)
អនុគម្រោងប្រព័ន្ធបង្ហូរទឹកកខ្វក់ និងប្រព័ន្ធបង្ហូរទឹកភ្លៀង- ការកែលើប្រព័ន្ធលូចំនួន៤ នៅក្នុងក្រុងសិរីសោភ័ណ

ខិត្តប័ណ្ណព័ត៌មានអំពីគម្រោង មានគោលបំណងផ្តល់នូវព័ត៌មានពាក់ព័ន្ធនឹងគម្រោងកែលម្អគ្រប់គ្រងបរិស្ថានក្រុងជុំវិញបឹងទន្លេសាប ជំហាន ២ ជូនដល់ប្រជាពលរដ្ឋ និងគ្រួសារនៅទីតាំងអនុគម្រោងរងដែលរងផលប៉ះពាល់ផ្នែករូបវន្ត (ផ្លាស់ប្តូរទីលំនៅ, បាត់បង់ដីលំនៅដ្ឋាន ឬបាត់បង់ទីជម្រក) ឬរងផលប៉ះពាល់ផ្នែកសេដ្ឋកិច្ច (ការបាត់បង់ដីធ្លី, ទ្រព្យសម្បត្តិ, លទ្ធភាពប្រើប្រាស់ទ្រព្យសម្បត្តិ, ប្រភពចំណូល ឬមធ្យោបាយនៃការចិញ្ចឹមជីវិត) ដែលបណ្តាលមកពីការធ្វើលទ្ធកម្មដី និងការងារដោះស្រាយផលប៉ះពាល់។ ខិត្តប័ណ្ណព័ត៌មានអំពីគម្រោងនេះ ត្រូវបានរៀបចំ និងធ្វើបច្ចុប្បន្នភាពសម្រាប់ការផ្លាស់ប្តូរប្រព័ន្ធខ្សែលូចំនួន៤ នៅក្រោមអនុគម្រោងប្រព័ន្ធលូ និងបង្ហូរទឹកភ្លៀងក្រុងសិរីសោភ័ណ។

ក. ការពិពណ៌នាសង្ខេបអំពីគម្រោង

១. តើគម្រោងកែលម្អគ្រប់គ្រងបរិស្ថានក្រុងជុំវិញបឹងទន្លេសាប ជំហាន ២ ជាគម្រោងអ្វី?

ធនាគារអភិវឌ្ឍន៍អាស៊ី (ADB) គាំទ្រដល់រាជរដ្ឋាភិបាលកម្ពុជាក្នុងការកែលម្អសេវានៅក្នុងទីក្រុង ដើម្បីលើកកម្ពស់ការតភ្ជាប់សេដ្ឋកិច្ចក្នុងតំបន់នៅតាមទីប្រជុំជននៃក្រុងស្ទឹងសែន សិរីសោភ័ណ និងបាត់ដំបង។ ដើម្បីសម្រេចបាននូវគោលដៅនេះ ការវិនិយោគលើហេដ្ឋារចនាសម្ព័ន្ធទីក្រុងជាមូលដ្ឋាន ដូចជាការប្រព័ន្ធបង្ហូរទឹកភ្លៀង និងទឹកកខ្វក់, អនាម័យ, និងការគ្រប់គ្រងកាកសំណល់រឹង។ សម្រាប់ទីក្រុងនីមួយៗសម្រាប់គម្រោងកែលម្អគ្រប់គ្រងបរិស្ថានក្រុងជុំវិញបឹងទន្លេសាប ជំហាន ២ នឹងធ្វើការអភិវឌ្ឍស្ថានីយប្រព្រឹត្តកម្មទឹកកខ្វក់, ប្រព័ន្ធបង្ហូរទឹកកខ្វក់ និងទឹកភ្លៀង និងទីលានកប់សំរាម។ គម្រោងទន្លេសាប ២ នឹងអភិវឌ្ឍទីក្រុងស្ទឹងសែន និងសិរីសោភ័ណ ដោយបណ្តាញប្រព័ន្ធបង្ហូរទឹកភ្លៀងបំបែកចេញពីប្រព័ន្ធបង្ហូរទឹកកខ្វក់។ ផែនទីនៅក្នុងឧបសម្ព័ន្ធ ១ បង្ហាញទីតាំងគម្រោងទាំងមូលជាមួយនឹងទីតាំងស្ថានីយប្រព្រឹត្តកម្មទឹកកខ្វក់, ស្ថានីយបូម, ប្រព័ន្ធប្រមូលទឹកកខ្វក់, ប្រព័ន្ធបង្ហូរទឹកភ្លៀង, និងទីតាំងកប់សម្រាម។ រដ្ឋាភិបាលបានទទួលប្រាក់កម្ចីនិងជំនួយឥតសំណងពីធនាគារអភិវឌ្ឍន៍អាស៊ី ដើម្បីអនុវត្តគម្រោងនេះ។ ប្រាក់កម្ចីនិងជំនួយឥតសំណង មានសុពលភាពចាប់ពីថ្ងៃទី១៤ ខែធ្នូ ឆ្នាំ២០១៨ ដល់ថ្ងៃទី៣០ ខែមិថុនា ឆ្នាំ២០២៤។ ក្រសួងសាធារណការ និងដឹកជញ្ជូន គឺជាក្រសួងអនុវត្តគម្រោងទន្លេសាប ២ នេះ។

២. តើទិន្នផលនៃគម្រោងទន្លេសាប ២ មានអ្វីខ្លះ?

គម្រោងទន្លេសាប ២ មានទិន្នផលចំនួន ៣ រួមមាន (i) ធ្វើឱ្យប្រសើរឡើងនូវហេដ្ឋារចនាសម្ព័ន្ធទីក្រុង (ii) បង្កើនប្រសិទ្ធភាពស្ថាប័ន និង (iii) ធ្វើឱ្យប្រសើរឡើងនូវគោលនយោបាយ និងផែនការបរិស្ថាន។

៣. តើអនុគម្រោងនៃគម្រោងទន្លេសាប ២ មានអ្វីខ្លះ និងមានសមាសភាគអ្វីខ្លះ?

សម្រាប់ក្រុងនីមួយៗ គម្រោងនឹងអភិវឌ្ឍរោងចក្រប្រព្រឹត្តកម្មទឹកកខ្វក់ (WWTP) បណ្តាញលូ និងកន្លែងចាក់សំរាមដែលត្រូវបានគ្រប់គ្រងជាមួយនឹងហេដ្ឋារចនាសម្ព័ន្ធ និងឧបករណ៍ដែលពាក់ព័ន្ធទាំងអស់។ គម្រោងនេះក៏នឹងអភិវឌ្ឍសម្រាប់ក្រុងស្ទឹងសែន និងក្រុងសិរីសោភ័ណ។ ផែនទីដែលបានភ្ជាប់បង្ហាញពីទីតាំងគម្រោងទាំងមូលជាមួយនឹងទីតាំងរបស់ WWTP ស្ថានីយ៍បូមទឹក ប្រព័ន្ធប្រមូល លូបង្ហូរទឹកភ្លៀង និងទីតាំងគ្រប់គ្រងសំណល់រឹង។

គម្រោងប្រព័ន្ធទឹកស្អាត និងលូក្នុងអនុគម្រោងសិរីសោភ័ណ នឹងសាងសង់ WWTP ចំណុះ ៣ ៥០០ m^3 ក្នុងមួយថ្ងៃ

លើផ្ទៃដីឯកជន ២៤ ហិចតា និងអភិវឌ្ឍប្រព័ន្ធជាច់ដោយឡែកសម្រាប់តំបន់សេវាខាងជើង-ខាងលិចទន្លេសិរីសោភ័ណ ដែលមានប្រព័ន្ធលូប្រវែង ១១០ គីឡូម៉ែត្រ និងស្ថានីយ៍បូមចំនួន ៤ ។ គម្រោងនេះនឹងធ្វើឱ្យប្រសើរឡើងនូវផ្លូវចូលទៅកាន់ WWTP ដែលមានប្រវែង៣ គីឡូម៉ែត្រ ។ បណ្តាញលូបង្ហូរទឹកភ្លៀងនឹងមានប្រវែង ៦,៩ គីឡូម៉ែត្រ។ **អនុគម្រោងគ្រប់គ្រងសំណល់រឹងសិរីសោភ័ណ នឹងអភិវឌ្ឍទីលានចាក់សំរាម** (១០ហិចតា) ដែលមានទំហំ ១៥២ ២៦០ ម៉ែត្រគូប (ម^{3}) ជាមួយនឹងឧបករណ៍ចាក់សំរាម នៅសង្កាត់កំពង់ស្វាយ ក្រុងសិរីសោភ័ណ។ ផ្លូវចូលទៅកន្លែងចាក់សំរាមនឹងត្រូវសាងសង់ដែលមានប្រវែង ១,៦ គីឡូម៉ែត្រ។

ការផ្លាស់ប្តូរប្រព័ន្ធលូចំនួន៤ ដែលមានខ្សែប្រវែង ២,៦ គីឡូម៉ែត្រ នឹងត្រូវផ្លាស់ប្តូរពីទីតាំងផ្លូវក្រោលកៅស៊ូមកទីតាំងចិញ្ចើមផ្លូវវិញដើម្បីបញ្ចៀសការខូចខាតលើផ្លូវក្រោលកៅស៊ូដែលមានស្រាប់ និងឧបករណ៍ប្រើប្រាស់ក្រោមដី (បំពង់ផ្គត់ផ្គង់ទឹក និងខ្សែអគ្គីសនី។ ការងារស្តារឡើងវិញនឹងត្រូវធ្វើឡើងនៅលើចិញ្ចើមផ្លូវដែលមានស្រាប់ ហើយដែលគ្មានឧបករណ៍ប្រើប្រាស់ផ្សេងនៅក្រោមដី **(រូបភាពទី១)**។ ការផ្លាស់ប្តូរប្រព័ន្ធខ្សែលូចំនួន ៤ មានទីតាំងនៅលើដីចំណីផ្លូវទាំងស្រុង ក៏ដូចជានៅក្នុង COI បច្ចុប្បន្នដែលបានកំណត់នៅក្នុង DRP នៃអនុគម្រោងប្រព័ន្ធទឹកស្អាត និងប្រព័ន្ធលូនៅសិរីសោភ័ណ។

រូបភាពទី១៖ ការកែតម្រឹមប្រព័ន្ធលូនៅលើផ្លូវ PR56, NR5 និងផ្លូវ BMC

៤. តើការធ្វើលទ្ធកម្មដី និងការងារដោះស្រាយផលប៉ះពាល់ មានវិសាលភាព និងផលប៉ះពាល់អ្វីខ្លះ?

សមាសភាគគម្រោងដែលតម្រូវសម្រាប់ការសាងសង់ស្ថានីយប្រព្រឹត្តកម្មទឹកកខ្វក់ និងទីតាំងកប់សំរាម នឹងមានផលប៉ះពាល់លើទ្រព្យសម្បត្តិផ្សេងៗ។ បន្ទាប់ពីមានគំនូសប្លង់បច្ចេកទេសលម្អិត អង្គភាពគ្រប់គ្រងគម្រោង និងទីប្រឹក្សាបច្ចេកទេស នឹងបោះព្រំបង្គោលនៅលើទីតាំងដីដែលរងផលប៉ះពាល់ មុនពេលការងារអង្កេតវាស់វែងលម្អិតចាប់ផ្តើម។

៥. តើដីចំណីផ្លូវ (ROW) និង របៀងនៃផលប៉ះពាល់ (COI) នៃអនុគម្រោងជាអ្វី?

នៅក្នុងប្រទេសកម្ពុជា ដីចំណីផ្លូវ សំដៅដល់ដីរបស់រដ្ឋនៅតាមបណ្តោយផ្លូវដែលមានចម្ងាយជាក់លាក់ពីអ័ក្សផ្លូវដែល

មានស្រាប់សម្រាប់ការអភិវឌ្ឍនាពេលអនាគត។ ដីនៅតាមដីចំណីផ្លូវ គឺជាដីដែលគ្រប់គ្រងដោយរដ្ឋ ឬរបស់រដ្ឋាភិបាល។ របៀងនៃផលប៉ះពាល់ គឺជាតំបន់ដែលបានស្នើសុំសម្រាប់អនុវត្តការងារស្តារហេដ្ឋារចនាសម្ព័ន្ធឡើងឡើងវិញ។ របៀងនៃផលប៉ះពាល់ពិតប្រាកដ នឹងត្រូវបានកែតម្រូវបន្ទាប់ពីគំនូសប្លង់បច្ចេកទេសលម្អិតត្រូវបានបញ្ចប់។ ប្រជាពលរដ្ឋរងផលប៉ះពាល់នៅក្នុង COI នៅក្រោយពេលទទួលបានប្រាក់សំណង ត្រូវធ្វើការរើទីតាំងដើម្បីឱ្យការងារសាងសង់អាចចាប់ផ្តើមបាន។

៦. តើថ្ងៃឧិសានវាទនៃសិទ្ធិទទួលបាន ជាអ្វី?

ថ្ងៃឧិសានវាទ គឺជាកាលបរិច្ឆេទដែលកំណត់ឡើងដោយរដ្ឋាភិបាលកម្ពុជាដែលបង្កើតនូវសិទ្ធិទទួលបាននៃគ្រួសារ / ប្រជាពលរដ្ឋរងផលប៉ះពាល់ សម្រាប់ទទួលបានសំណង និងជំនួយផ្សេងៗនៅក្រោមអនុគម្រោងនេះ។ មានតែប្រជាពលរដ្ឋ ដែលស្ថិតនៅក្នុង តំបន់របៀងនៃផលប៉ះពាល់ ឬបាត់បង់ទ្រព្យសម្បត្តិមុនពេលថ្ងៃឧិសានវាទប៉ុណ្ណោះ នឹងមានសិទ្ធិទទួលបានសំណងនិងជំនួយ។ ជនណាដែលកាន់កាប់ដី ឬសាងសង់សំណង់បន្ថែម ឬកែលម្អផ្ទះសម្បែងរបស់ខ្លួនបន្ទាប់ពីថ្ងៃឧិសានវាទ នឹងមិនមានសិទ្ធិទទួលបានសំណងឡើយ។ ទ្រព្យសម្បត្តិផ្សេងៗ ដូចជាសំណង់ដែលបានសាងសង់ (ថ្មី ឬពង្រីកបន្ថែមលើសំណង់មានស្រាប់) ដំណាំដើមឈើហូបផ្លែ និងទ្រព្យសម្បត្តិប្រហាក់ប្រហែលផ្សេងទៀត បន្ទាប់ពីថ្ងៃឧិសានវាទ នឹងមិនត្រូវបានទទួលសំណងទេ។

ថ្ងៃឧិសានវាទ សម្រាប់អនុគម្រោងនេះ គឺជាកាលបរិច្ឆេទនៃការពិគ្រោះយោបល់ជាសាធារណៈលើកដំបូង ដែលនឹងត្រូវធ្វើឡើងមុនពេលការអង្កេតវាស់វែងលម្អិត។ ថ្ងៃឧិសានវាទ គឺនៅថ្ងៃទី៧ ខែឧសភា ឆ្នាំ២០២៥។

៧. តើបញ្ជីទ្រព្យសម្បត្តិដែលរងផលប៉ះពាល់ និងការអង្កេតវាស់វែងលម្អិតជាអ្វី ហើយត្រូវធ្វើឡើងនៅពេលណា?

ការអង្កេតវាស់វែងលម្អិត (DMS) គឺជាការអង្កេតលម្អិត និងវាស់វែងរាល់ទ្រព្យសម្បត្តិដែលរងផលប៉ះពាល់រួមមាន ដីធ្លី ផ្ទះសម្បែងនិងសំណង់, គូប/ហាង, ដំណាំ និងដើមឈើទាំងអស់របស់ប្រជាពលរដ្ឋរងផលប៉ះពាល់។ ការអង្កេតវាស់វែងលម្អិត នឹងត្រូវបានធ្វើឡើងសម្រាប់គ្រួសារនីមួយៗ ដើម្បីកត់ត្រា និងដើម្បីឱ្យមានការឯកភាពចំពោះរាល់ការបាត់បង់ទ្រព្យសម្បត្តិរបស់ពួកគាត់។ ការអង្កេតនេះ ក៏នឹងត្រូវប្រមូលព័ត៌មាន និងទិន្នន័យស្តីពីស្ថានភាពសេដ្ឋកិច្ច សង្គម, ប្រភពនៃការចិញ្ចឹមជីវិត, ប្រាក់ចំណូល, កម្រិតការសិក្សារបស់មេគ្រួសារ និងសមាជិក, ភាពងាយរងគ្រោះជាដើម ដែលត្រូវបានធ្វើឡើងដោយមានវត្តមានរបស់គ្រួសាររងផលប៉ះពាល់ និងមានការចូលរួមពីមេឃុំ ឬភូមិផងដែរ។ ការអង្កេតវាស់វែងលម្អិត នឹងក្លាយជាមូលដ្ឋានសម្រាប់ការគណនាកញ្ចប់សំណងសម្រាប់គ្រួសាររងផលប៉ះពាល់នីមួយៗ។ ការអង្កេតវាស់វែងលម្អិត នឹងត្រូវធ្វើឡើងបន្ទាប់ពីគំនូសប្លង់បច្ចេកទេសលម្អិតត្រូវបានបញ្ចប់។ ប្រជាពលរដ្ឋរងផលប៉ះពាល់ និងអាជ្ញាធរមូលដ្ឋាន នឹងត្រូវជូនដំណឹង មុននឹងចាប់ផ្តើមការងារអង្កេតវាស់វែងលម្អិត។

៨. តើសំណង និងសិទ្ធិទទួលបានសំណង មានអ្វីខ្លះ?

គ្រួសារ / ប្រជាពលរដ្ឋដែលរងផលប៉ះពាល់ពីគម្រោង មានសិទ្ធិទទួលបានសំណង សម្រាប់ទ្រព្យសម្បត្តិដែលរងផលប៉ះពាល់ ក្រោមគោលការណ៍សំណងសំខាន់ៗដូចខាងក្រោម៖

- ការផ្តល់សំណងជាមុនដោយត្រឹមត្រូវ និងយុត្តិធម៌
- ការផ្តល់សំណងពេញលេញ មុនពេលធ្វើការដកហូត
- សំណងត្រូវផ្អែកលើអត្រាថ្លៃជំនួសនៃទ្រព្យសម្បត្តិដែលបាត់បង់ក្នុងតម្លៃទីផ្សារ ដែលនឹងត្រូវបានកំណត់ដោយទីប្រឹក្សាឯករាជ្យតាមរយៈការសិក្សាថ្លៃជំនួស ដោយគ្មានការកាត់ចេញណាមួយសម្រាប់ការរំលោះ សម្ភារៈនៅសល់ពីការរុះរើ និងថ្លៃដើមប្រតិបត្តិការ។

(ក) តើខ្ញុំនឹងទទួលបានសំណងសម្រាប់ការបាត់បង់ដីដែរឬទេ?

ដីចំណីផ្លូវ គឺជាដីរបស់រដ្ឋ ហើយគ្រួសារដែលរងផលប៉ះពាល់ដែលកាន់កាប់ដីនៅលើដីចំណីផ្លូវ នឹងមិនត្រូវបានផ្តល់សំណងសម្រាប់ដីនោះទេ។ តែទោះបីជាយ៉ាងនេះក្តី ពួកគេនឹងត្រូវទទួលបានសំណងសម្រាប់ការបាត់បង់ណាមួយដែលបណ្តាលមកពីការប្រើប្រាស់ដី ឧទាហរណ៍ដូចជា មានតូប/ហាងប្រកបរបរ, ការដាំដំណាំឬដើមឈើហូបផ្លែ ឬការសាងសង់សំណង់ផ្សេងៗ។

ក្នុងករណី បន្ទាប់ពីគំនូសប្លង់បច្ចេកទេសលម្អិតត្រូវបានបញ្ចប់ ប្រសិនបើមានការចាំបាច់ក្នុងការធ្វើលទ្ធកម្មដីឯកជនសម្រាប់ការអ័ក្សថ្មី ឬដីដែលប្រជាពលរដ្ឋមានសិទ្ធិស្របច្បាប់ស្ថិតនៅក្រៅដីចំណីផ្លូវ ដោយសារការផ្លាស់ប្តូរការគូសប្លង់ នោះសំណងនឹងត្រូវផ្តល់ជូនតាមថ្លៃជំនួស នៃដីដែលត្រូវធ្វើលទ្ធកម្ម។

(ខ) តើខ្ញុំនឹងទទួលបានសំណងសម្រាប់ផ្ទះ និងសំណង់ដែរឬទេ?

អ្នកនឹងទទួលបានសំណង។ ផ្ទះ និងសំណង់ឯកជន ដែលរងផលប៉ះពាល់ពីគម្រោង នឹងត្រូវផ្តល់សំណងដោយថ្លៃជំនួសដោយមិនរាប់បញ្ចូលការរំលោះ, សម្ភារៈនៅសល់បន្ទាប់ពីការរុះរើ ឬថ្លៃដើមប្រតិបត្តិការនោះទេ។ សំណង់ រួមមាន របង អណ្តូង ផ្លូវថ្មើរជើងក្រាលបេតុង និងសំណង់ស្រដៀងគ្នាផ្សេងទៀត ដែលប្រជាពលរដ្ឋអាចបង្ហាញពីភាពជាម្ចាស់កម្មសិទ្ធិ។ ប្រសិនបើផ្ទះ ឬសំណង់ ត្រូវបានរងផលប៉ះពាល់ដោយផ្នែក នោះសំណងនឹងត្រូវផ្តល់ជូនសម្រាប់តែផ្នែកដែលរងផលប៉ះពាល់ប៉ុណ្ណោះ លើកលែងតែអាចបង្ហាញថាបន្ទាប់ពីការដកចេញនូវផ្នែកដែលរងផលប៉ះពាល់ ផ្នែកដែលនៅសល់មិនអាចប្រើប្រាស់បានតទៅទៀត។ ក្នុងករណីបែបនេះ សំណងនឹងត្រូវផ្តល់ជូនសម្រាប់សំណង់ទាំងមូល។

(គ) តើខ្ញុំនឹងទទួលបានសំណងសម្រាប់ដំណាំ និងដើមឈើហូបផ្លែរបស់ខ្ញុំដែរឬទេ?

អ្នកនឹងទទួលបានសំណង។ ចំពោះដំណាំមិនទាន់ប្រមូលផល ដែលមិនអាចប្រមូលផលបាន នៅពេលដែលមានការធ្វើលទ្ធកម្មដី ប្រជាពលរដ្ឋ នឹងទទួលបានសំណងសម្រាប់ដំណាំដែលបាត់បង់តាមថ្លៃជំនួស។ សម្រាប់ដំណាំដែលប្រមូលផលប្រចាំឆ្នាំ ដែលត្រូវបានដាំដុះតាមរដូវកាលប្រចាំឆ្នាំ ដូចជា ស្រូវ សំណងនឹងផ្តល់ជាប្រាក់ចំណូលសុទ្ធ X ១ ឆ្នាំ។ លើសពីនេះទៀត ការជូនដំណឹងដល់ប្រជាពលរដ្ឋក្នុងពេលវេលាសមស្រប នឹងត្រូវធ្វើឡើងដើម្បីឱ្យពួកគេអាចប្រមូលផលដំណាំបានទាន់ពេលវេលា។

ចំពោះដំណាំហូបផ្លែដែលមានអាយុច្រើនឆ្នាំ (ដើមឈើដែលផ្តល់ផលច្រើនឆ្នាំ ដូចជា ដើមស្វាយ) ប្រជាពលរដ្ឋ នឹងត្រូវបានផ្តល់សំណងចំពោះការបាត់បង់ដើមឈើហូបផ្លែ ដែលនឹងគិតគូរពីការបាត់បង់ប្រាក់ចំណូល និងពេលវេលាដែលត្រូវការដើម្បីដាំដុះ ឡើងវិញ។

(ឃ) ប្រសិនបើផ្ទះ ឬតូបរបស់ខ្ញុំត្រូវផ្លាស់ទីតាំង តើមានជំនួយសម្រាប់ការផ្លាស់ប្តូរទីតាំងដែរឬទេ?

អ្នកនឹងទទួលបានជំនួយ។ ក្នុងដំណាក់កាលរចនាគំនូសប្លង់បច្ចេកទេសលម្អិត មានការគិតគូរបញ្ចៀសផលប៉ះពាល់ដើម្បីជៀសវាងមានការផ្លាស់ទីលំនៅរបស់ប្រជាពលរដ្ឋ។
ចំពោះការផ្លាស់ទីតាំងផ្ទះ ឬសំណង់ប្រហាក់ប្រហែលគ្នាពីរបៀងនៃផលប៉ះពាល់ នឹងត្រូវផ្តល់ប្រាក់ឧបត្ថម្ភក្នុងរយៈពេលអន្តរកាល, ជំនួយក្នុងការផ្លាស់ប្តូរទីតាំង និងជម្រើសក្នុងការផ្លាស់ប្តូរទៅទីតាំងថ្មី។ វាអាចមានការតម្រូវឱ្យផ្លាស់ប្តូរទីតាំងតូបមួយចំនួនដែលត្រូវធ្វើការផ្លាស់ប្តូរទីតាំងដោយខ្លួនឯង ឬត្រូវរំកិលចេញពីទីតាំងដីចំណីផ្លូវ។ ក្រៅពីសំណងសម្រាប់សំណង់ក្នុងអត្រាថ្លៃ ជំនួស ប្រាក់ឧបត្ថម្ភអន្តរកាលនឹងត្រូវផ្តល់ជូន មានដូចជា៖ (i) ប្រាក់ឧបត្ថម្ភដឹកជញ្ជូនសរុបមួយលើក សម្រាប់ការរុះរើទ្រព្យសម្បត្តិ (ii) ប្រាក់ឧបត្ថម្ភសម្រាប់ការបាត់បង់ប្រាក់ចំណូលពីអាជីវកម្ម។

(ង) ក្នុងករណីដែលជីវភាពរបស់ខ្ញុំរងផលប៉ះពាល់ តើខ្ញុំនឹងទទួលបានសំណងដូចម្តេច?

ការអង្កេតវាស់វែងលម្អិត នឹងកត់សម្គាល់អំពីជីវភាពរស់នៅរបស់ប្រជាពលរដ្ឋ ថាតើមានផលប៉ះពាល់អ្វីខ្លះដល់ពួកគេ។ នៅក្រោមក្របខ័ណ្ឌគម្រោង សម្រាប់ប្រជាពលរដ្ឋដែលជីវភាពរស់នៅរបស់ពួកគេរងផលប៉ះពាល់ ពួកគេនឹងទទួលបានសំណងចំពោះការបាត់បង់ប្រាក់ចំណូល ឬការគាំទ្រដល់ការស្តារជីវភាពឡើងវិញ៖

(i) ការបាត់បង់ប្រាក់ចំណូលក្នុងកំឡុងពេលអន្តរកាលនៅពេលដែលមានការផ្លាស់ប្តូរទីតាំង។ សំណង នឹងគ្របដណ្តប់លើការបាត់បង់ប្រាក់ចំណូលក្នុងកំឡុងពេលប្រជាពលរដ្ឋផ្លាស់ប្តូរទីតាំងដោយខ្លួនឯង។

(ii) នៅពេលដែលប្រភពចំបងនៃការចិញ្ចឹមជីវិតត្រូវបានបាត់បង់ជាអចិន្ត្រៃយ៍ កម្មវិធីស្តារ/ទ្រទ្រង់ជីវភាពឡើងវិញនឹងត្រូវបានផ្តល់ជូនដើម្បីជួយគ្រួសារ/ប្រជាពលរដ្ឋ ដើម្បីកសាង/ស្តារជីវភាពឡើងវិញ។

ក្នុងករណីដែលប្រជាពលរដ្ឋ ត្រូវបានចាត់ថាជាជនក្រីក្រ និងងាយរងគ្រោះ ប្រាក់ជំនួយជាសាច់ប្រាក់នៅក្នុងកម្មវិធីស្តារប្រាក់ចំណូលឡើងវិញ នឹងផ្តល់ជូនទ្វេដង។ លើសពីនេះទៀត គម្រោងនឹងស្វែងរកឱកាសការងារក្នុងអំឡុងពេលសាងសង់ជូនពួកគាត់។

៩. តើថ្លៃជំនួសនឹងត្រូវសិក្សាដោយរបៀបណា ហើយសំណងនឹងត្រូវគណនាដូចម្តេច?

ការទូទាត់សំណងនឹងត្រូវធ្វើឡើង ដោយផ្អែកលើតម្លៃទីផ្សារ ឬថ្លៃជំនួស សម្រាប់ទ្រព្យសម្បត្តិដែលបាត់បង់ដោយមិនមានការកាត់ សម្ភារៈនៅសល់បន្ទាប់ពីការរុះរើ, ការរំលោះ ឬថ្លៃដើមប្រតិបត្តិការនោះទេ។ ការសិក្សាថ្លៃជំនួស នឹងត្រូវបានធ្វើឡើងដោយទីប្រឹក្សាឯករាជ្យក្នុងតំបន់ដែលមានសមត្ថភាព និងបទពិសោធន៍ ក្នុងការវាយតម្លៃដើម្បីកំណត់អត្រាតម្លៃទីផ្សារទូទៅ។ ការសិក្សានេះ ត្រូវបានធ្វើនៅពេលដំណាលគ្នានៃការអង្កេតវាស់វែងលម្អិត។ ទីប្រឹក្សាសិក្សាថ្លៃជំនួស នឹងធ្វើការវិភាគលម្អិតអំពីអត្រាតម្លៃទីផ្សារសម្រាប់ទ្រព្យសម្បត្តិគ្រប់ប្រភេទដែលរងផលប៉ះពាល់ដោយសារគម្រោង ឬតំបន់អនុគម្រោង ហើយនឹងរៀបចំអត្រាឯកតាសម្រាប់ប្រភេទនីមួយៗនៃទ្រព្យសម្បត្តិដែលរងផលប៉ះពាល់។ អត្រាឯកតាទាំងនោះ នឹងត្រូវបានប្រើដើម្បីគណនាថ្លៃជំនួស ហើយនឹងត្រូវបានប្រើដើម្បីរៀបចំថវិកាសម្រាប់ការងារដោះស្រាយផលប៉ះពាល់។ អគ្គនាយកដ្ឋានដោះស្រាយផលប៉ះពាល់ដោយសារគម្រោងអភិវឌ្ឍន៍ នៃក្រសួងសេដ្ឋកិច្ចនិងហិរញ្ញវត្ថុ នឹងជ្រើសរើសទីប្រឹក្សាសិក្សាថ្លៃជំនួស មុនពេលចាប់ផ្តើមការងារអង្កេតវាស់វែងលម្អិត។

១០. តើខ្ញុំមានសិទ្ធិក្នុងការតវ៉ាអំពីការមិនយល់ស្រប, បញ្ហាសំណង, បញ្ហាពាក់ព័ន្ធនឹងការងារដោះស្រាយផលប៉ះពាល់ ឬបញ្ហាផ្សេងៗបានដែរឬទេ? ប្រសិនបើបាន តើត្រូវធ្វើដូចម្តេច?

ត្រូវហើយអ្នកមានសិទ្ធិដាក់ពាក្យបណ្តឹងរបស់អ្នកទៅកាន់គណៈកម្មការដោះស្រាយបណ្តឹងតវ៉ា (GRC) ប្រសិនបើអ្នកមិនច្បាស់ឬមិនសប្បាយចិត្តនឹងសកម្មភាពតាំងទីលំនៅថ្មី។ ព័ត៌មានសមាជិក នៃ GRC ត្រូវបានផ្តល់នៅក្នុងឧបសម្ព័ន្ធទី ២ នៃ PIB ហើយនឹងត្រៀមខ្លួនគ្រប់ពេលដើម្បីជួយអ្នក។ ការព្យាយាមដោះស្រាយបណ្តឹងតវ៉ារបស់អ្នកនឹងចាប់ផ្តើមនៅថ្នាក់ភូមិតាមរយៈមេភូមិ។ ទោះយ៉ាងណាអ្នកអាចដាក់ពាក្យបណ្តឹងពាក្យសុំដីទៅកាន់សមាជិកណាមួយនៃ GRC (ឧទាហរណ៍នៅភូមិឃុំឬក្រុមការងារដោះស្រាយផលប៉ះពាល់) ។ GRC នឹងកត់ត្រានិងចងក្រងពាក្យបណ្តឹងរបស់អ្នក ហើយណែនាំអ្នកអំពីដំណោះស្រាយ។

GRM សម្រាប់អនុគម្រោងនេះត្រូវបានបង្កើតឡើងនៅថ្ងៃទី១៧ ខែមីនា ឆ្នាំ២០២០ ហើយនឹងត្រូវបានដាក់ឱ្យប្រើប្រាស់សម្រាបការកែតម្រូវប្រព័ន្ធលូទាំង ៤ នេះផងដែរ។ GRM បង្កើតឡើងដើម្បីដោះស្រាយបណ្តឹង ទាក់ទងនឹងសំណងមិនសមហេតុផលសិទ្ធិមិនត្រឹមត្រូវក្នុងការវាស់វែងលម្អិតឬកំហុសក្នុងការគណនាការទូទាត់សំណង។ GDR តាមរយៈគ

ណៈកម្មការអន្តរក្រសួងដោះស្រាយផលប៉ះពាល់ដោយសារគម្រោងអភិវឌ្ឍន៍ (IRC) នឹងជួយសម្រួលដល់ការបង្កើតគណៈកម្មការដោះស្រាយបណ្តឹងតវ៉ាថ្នាក់ខេត្ត (PGRC)។ PGRC នឹងត្រូវបានបង្កើតឡើងដោយអភិបាលខេត្ត ដោយពិគ្រោះយោបល់ជាមួយ IRC។ សមាសភាពរបស់ PGRC និងព័ត៌មានទំនាក់ទំនងដោយមានទម្រង់ពាក្យបណ្តឹងក្នុង**ឧបសម្ព័ន្ធទី២-៥**។

គណៈកម្មការដោះស្រាយបណ្តឹងតវ៉ាខេត្តបន្ទាយមានជ័យ ត្រូវបានបង្កើតឡើងនៅថ្នាក់ខេត្តជាមួយនឹងដំណើរការដែលចាប់ផ្តើមពីការិយាល័យឃុំ។ ដូចដែលបានអនុវត្ត GRC រួមមានតែមេឃុំ ឬមេភូមិដែលពាក់ព័ន្ធប៉ុណ្ណោះ។ ការប្រើប្រាស់អង្គការក្នុងស្រុកត្រូវបានអនុញ្ញាតិអោយជួយមេគ្រួសាររងផលប៉ះពាល់ក្នុងការដាក់ពាក្យបណ្តឹងជាពិសេសអ្នកដែលមិនដឹងពីរបៀបរៀបចំពាក្យបណ្តឹងជាលាយលក្ខណ៍អក្សរ ក៏ដូចជាជនជាតិដើម / ជនជាតិដើមភាគតិចដែលមានបញ្ហាភាសា។ មន្ត្រីឃុំដែលបានចាត់តាំងត្រូវខិតខំប្រឹងប្រែងដើម្បីដោះស្រាយបញ្ហារបស់មេគ្រួសាររងផលប៉ះពាល់នៅថ្នាក់ឃុំ សង្កាត់តាមរយៈការពិគ្រោះយោបល់សហគមន៍សមស្រប។ រាល់ការប្រជុំទាំងអស់នឹងត្រូវកត់ត្រានៅក្នុងដំណើរការបណ្តឹងតវ៉ានីមួយៗហើយច្បាប់ចម្លងត្រូវផ្តល់ជូនមេគ្រួសាររងផលប៉ះពាល់។ នីតិវិធីសម្រាប់ដោះស្រាយបណ្តឹងតវ៉ាត្រូវបានកំណត់ដូចខាងក្រោម។

ទោះបីជាយ៉ាងណាក៏ដោយ មុនជំហានទី១ គ្រួសាររងផលប៉ះពាល់អាចសុំជំនួយពីមេឃុំ ឬចាស់ទុំតំណាងសហគមន៍ដើម្បីពិភាក្សានិងស្វែងរកដំណោះស្រាយចំពោះបណ្តឹងសារទុក្ខរបស់ពួកគាត់ជាមួយប្រធាន PRSC-WG។ នីតិវិធីនេះត្រូវបានធ្វើឡើងតាមរយៈពាក្យសំដីមិនផ្លូវការ និងពុំមានការកត់ត្រា ក្នុងគោលបំណងដើម្បីដោះស្រាយបញ្ហា ប ញ្ជៀសពីការប្តឹងតវ៉ាជាលាយលក្ខណ៍អក្សរជាផ្លូវការ។ ប្រសិនបើពាក្យបណ្តឹងនៅតែមិនទាន់អាចដោះស្រាយបាន ឬមិនទាន់ពេញចិត្ត អ្នកដាក់ពាក្យបណ្តឹង/ប្រជាពលរដ្ឋរងផលប៉ះពាល់អាចដាក់បណ្តឹងផ្លូវការតាមយន្តការទាំង ៣ ដូចខាងក្រោម៖

ដំណាក់កាលទី១៖ ប្រជាពលរដ្ឋរងផលប៉ះពាល់ដែលជាដើមបណ្តឹង អាចដាក់ពាក្យបណ្តឹងជាលាយលក្ខអក្សរទៅកាន់ប្រធានការិយាល័យស្រុកដែលជាតំបន់អនុគម្រោងស្ថិតនៅ។ ប្រជាពលរដ្ឋរងផលប៉ះពាល់អាចនាំចាស់ទុំ ឬអ្នកតំណាងក្នុងសហគមន៍ទៅជាមួយ ដើម្បីជួយសម្របសម្រួលនៅថ្នាក់ស្រុក។ ក្រុមការងារអន្តរក្រសួងនឹងវាយតម្លៃការដោះស្រាយបណ្តឹងនៅថ្នាក់ស្រុក។ កិច្ចប្រជុំពិភាក្សា និងការសម្រេចចិត្តផ្សេងៗ នឹងត្រូវធ្វើឡើងក្នុងរយៈពេល១៥ថ្ងៃគិតចាប់ពីថ្ងៃទទួលពាក្យបណ្តឹងដោយការិយាល័យស្រុក។ ប្រសិនបើប្រជាពលរដ្ឋរងផលប៉ះពាល់ពេញចិត្តនឹងការដោះស្រាយបណ្តឹងហើយនោះ ក្រុមការងារអន្តរក្រសួងនឹងជូនដំណឹងដល់នាយកដ្ឋានដោះស្រាយផលប៉ះពាល់ នៃអគ្គនាយកដ្ឋានគ្រប់គ្រងទិន្នន័យនិងវាយតម្លៃផ្ទៃក្នុង ដើម្បីធ្វើការពិនិត្យ និងអនុម័តដោយអគ្គនាយកនៃនាយកដ្ឋានដោះស្រាយផលប៉ះពាល់ ដើម្បីធ្វើសកម្មភាពដោះស្រាយដ៏សមស្រប។ ប្រជាពលរដ្ឋរងផលប៉ះពាល់នឹងត្រូវជូនដំណឹងជាលាយលក្ខអក្សរដោយនាយកដ្ឋានដោះស្រាយផលប៉ះពាល់ នូវសេចក្តីសម្រេច និងសកម្មភាពដោះស្រាយបណ្តឹង ដែលនឹងធ្វើឡើងក្នុងរយៈពេល១៥ថ្ងៃអំឡុងពេលថ្ងៃធ្វើការងារ គិតចាប់ពីថ្ងៃទទួលពាក្យបណ្តឹងដោយការិយាល័យស្រុក។ ប្រសិនបើបណ្តឹងត្រូវបានដំទាស់ក្នុងដំពាក់កាលនេះ ការិយាល័យស្រុកនិងជូនដំណឹងទៅសាមីជនជាលាយលក្ខអក្សរ ប្រសិនបើសាមីជនមិនយល់ព្រមនឹងការដំទាស់នេះទេ សាមីជនអាចប្តឹងបន្តទៅដំណាក់កាល

បន្ទាប់ ដែលត្រូវសរសេរពាក្យបណ្តឹងជាលាយលក្ខអក្សរទៅនាយកដ្ឋានដោះស្រាយផលប៉ះពាល់ដើម្បីស្វែងរកដំណោះស្រាយបន្ត។

ដំណាក់កាលទី២៖ នាយកដ្ឋានដោះស្រាយផលប៉ះពាល់តាមរយៈនាយកដ្ឋានត្រួតពិនិត្យផ្ទៃក្នុង និងគ្រប់គ្រងទិន្នន័យ និងវាយតម្លៃ នឹងពិនិត្យមើលជារួមនៃទិដ្ឋភាពបណ្តឹង នឹងដាក់ជូននូវរបាយការណ៍ស៊ើបសួរទៅអគ្គនាយកដើម្បីពិនិត្យ និងសម្រេច។ នាយកដ្ឋានដោះស្រាយផលប៉ះពាល់ នឹងអាចចុះប្រមូលទិន្នន័យនៅថ្នាក់មូលដ្ឋានដើម្បីជួបជាមួយដើមបណ្តឹង និងក្រុមការងារគណៈកម្មការអន្តរក្រសួងដើម្បីប្រមូលព័ត៌មានលម្អិត។ របាយការណ៍សម្រេចត្រូវតែបំពេញក្នុងរយៈពេល៣០ថ្ងៃ បន្ទាប់ពីថ្ងៃទទួលពាក្យបណ្តឹង និងដាក់ជូនបណ្តឹងទៅអគ្គនាយកដ្ឋាននៃនាយកដ្ឋានដោះស្រាយផលប៉ះពាល់ ដើម្បីធ្វើការសម្រេចចុងក្រោយក្នុងរយៈពេល៥ថ្ងៃ នៃអំឡុងពេលទទួលរបាយការណ៍។ នៅក្នុងករណីដែលបណ្តឹងតម្រូវអោយមានការអន្តរាគមន៍ពីថ្នាក់គោលនយោបាយជាតិ គឺនឹងត្រូវសម្រេចយោងពីសេចក្តីសម្រេចរបស់គណៈកម្មការអន្តរក្រសួង ក្នុងករណីនេះរយៈពេល១០ថ្ងៃនឹងត្រូវបន្ថែមទៀត គិតចាប់ពីថ្ងៃសម្រេចចុងក្រោយ។

ដំណាក់កាលទី៣៖ ប្រជាពលរដ្ឋរងផលប៉ះពាល់នឹងដាក់ពាក្យបណ្តឹងជាលាយលក្ខអក្សរទៅគណៈកម្មការដោះស្រាយបណ្តឹងថ្នាក់ខេត្ត តាមរយៈសាលាខេត្ត។ ដើមបណ្តឹងឬអ្នកតំណាងនឹងត្រូវបានផ្តល់ឱកាសរាយការណ៍អំពីករណីបណ្តឹង ក្នុងអំឡុងពេលកិច្ចប្រជុំ ហើយគណៈកម្មការដោះស្រាយបណ្តឹង នឹងពិចារណាលើភស្តុតាង និងកាលៈទេសៈចាំបាច់ណាមួយរបស់ដើមបណ្តឹង មុននឹងឈានដល់ការសម្រេចចិត្ត។ នាយកដ្ឋានដោះស្រាយផលប៉ះពាល់នឹងបញ្ជូនតំណាងរបស់ខ្លួនដែលមិនជាប់ពាក់ព័ន្ធនឹងបណ្តឹង ទៅធ្វើការពន្យល់បង្ហាញដើម្បីជំទាស់នឹងដើម បណ្តឹងដូចដែលបានធ្វើឡើងនៅដំណាក់កាលទីពីរ ដែលដោះស្រាយដោយនាយកដ្ឋានដោះស្រាយផលប៉ះពាល់។ សេចក្តីសម្រេចរបស់គណៈកម្មការថ្នាក់ខេត្តត្រូវតែឈានដល់ កិច្ចព្រមព្រៀងជាគោល និងបញ្ចប់ដោយមិនអាចកែប្រែបានលើកលែងតែករណីទាំងឡាយណាដែលទាក់ទងទៅនឹងគោលនយោបាយរបស់រាជរដ្ឋាភិបាល។ សេចក្តីសម្រេចរបស់គោលនយោបាយរាជរដ្ឋាភិបាលទាក់ទងទៅនឹងក្របខ័ណ្ឌស្តីពីការធ្វើលទ្ធកម្មដីនិងការងារដោះស្រាយផលប៉ះពាល់ គឺត្រូវធ្វើសេចក្តីសម្រេចដោយគណៈកម្មការអន្តរក្រសួង។ គណៈកម្មការដោះស្រាយបណ្តឹងថ្នាក់ខេត្ត មានរយៈពេល ៤០ថ្ងៃដើម្បីចេញសេចក្តីសម្រេច ដោយគិតចាប់ពីថ្ងៃទទួលពាក្យបណ្តឹងរហូតដល់ធ្វើការសម្រេចចុងក្រោយ។

ការដោះស្រាយបណ្តឹងតវ៉ាតាមនិតិវិធីរដ្ឋបាលត្រូវបានបញ្ចប់នៅដំណាក់កាលទី៣។ ចំពោះដំណើរការបណ្តឹងទាំងនេះ ដើមបណ្តឹង នឹងមិនមានការបង់ប្រាក់អ្វីទេរាប់ចាប់ពីដំណាក់កាលទី១ ដំណាក់កាលទី២ រហូតដល់ដំណាក់កាលទី៣។ ទោះជាយ៉ាងណាក៏ដោយ ដូចដែលមានចែងក្នុងច្បាប់អស្សាមីករណ៍ ដើមបណ្តឹងអាចធ្វើការដាក់ពាក្យប្តឹងទៅតុលាការខេត្ត/ក្រុង តាមដែលអាចអនុវត្តបានដើម្បីស្វែងរកដំណោះស្រាយ។ ដំណើរការនេះ ដើមបណ្តឹងនឹងត្រូវចំណាយថវិកាខ្លួនឯង។ នៅក្នុងដំណាក់កាលនេះ អគ្គនាយកដ្ឋានដោះស្រាយផលប៉ះពាល់ គណៈកម្មការដោះស្រាយបណ្តឹងថ្នាក់ខេត្ត ឬក្រុមការងារគណៈកម្មការអន្តរក្រសួង មិនមានសមត្ថកិច្ចពាក់ព័ន្ធអ្វីទេ ល្អឹកណាមានដីការកោះពីអង្គចៅក្រមសាលាដំបូងខេត្ត។

១១. តើខ្ញុំអាចទំនាក់ទំនងទៅកាន់អ្នកណា ក្នុងករណីដែលខ្ញុំត្រូវការការបញ្ជាក់ ឬមានបញ្ហា/ការតវ៉ា?

ដោយសារគម្រោងត្រូវបានអនុម័តដោយធនាគារអភិវឌ្ឍន៍អាស៊ី ហើយកិច្ចព្រមព្រៀងប្រាក់កម្ចី និងជំនួយឥតសំណង ត្រូវបានចុះហត្ថលេខារួចហើយ បច្ចុប្បន្ននេះគម្រោងកំពុងអនុវត្ត អ្នកអាចទំនាក់ទំនងទៅកាន់លេខទូរស័ព្ទរបស់អ្នកទទួលបន្ទុក ដែលបានផ្តល់ជូននៅក្នុងប្រអប់ខាងក្រោម ដែលអាចផ្តល់ឱ្យអ្នកនូវការបំភ្លឺពាក់ព័ន្ធនឹងបញ្ហាបច្ចេកទេសបាន។ ក្នុងអំឡុងពេលនេះ សិទ្ធិទទួលបានសំណង, ការខាតបង់ទ្រព្យសម្បត្តិ, ការអង្កេតវាស់វែងលម្អិត និងកញ្ចប់សំណង មិនទាន់ត្រូវបានកំណត់នោះទេហេតុដូច្នេះហើយពាក្យបណ្តឹងពាក់ព័ន្ធមិនទាន់មាននោះទេ។

គម្រោងទន្លេសាប ២ ត្រូវបានអនុម័តដោយធនាគារអភិវឌ្ឍន៍អាស៊ី ដូច្នេះគណៈកម្មការអន្តរក្រសួងដោះស្រាយផលប៉ះពាល់នៃក្រសួងសេដ្ឋកិច្ចនិងហិរញ្ញវត្ថុ បានរៀបចំឱ្យមានការបង្កើតនូវយន្តការដោះស្រាយបណ្តឹងតវ៉ា ដែលមាននៅទាំងថ្នាក់ស្រុក និងថ្នាក់ខេត្ត។ គណៈកម្មការនេះ ត្រូវបានបង្កើតឡើង និងដំណើរការមុនពេលចាប់ផ្តើមការអង្កេតវាស់វែងលម្អិត។ រាល់បណ្តឹងតវ៉ា ឬការតវ៉ានានាទាក់ទងនឹងការវាស់វែងខុស ឬកញ្ចប់សំណងមិនត្រឹមត្រូវ នឹងត្រូវបានកត់ត្រានៅក្នុងទម្រង់ពាក្យបណ្តឹង ត្រូវបញ្ជូនទៅគណៈកម្មការដោះស្រាយបណ្តឹងតវ៉ាដើម្បីរកដំណោះស្រាយ។

លេខទំនាក់ទំនងពាក់ព័ន្ធនឹងការធ្វើលទ្ធកម្មដី និងការងារដោះស្រាយផលប៉ះពាល់

លោក អេត រ៉ូណ្ណៈ, អនុប្រធានការិយាល័យ នៃអគ្គនាយកដ្ឋានដោះស្រាយផលប៉ះពាល់ដោយសារគម្រោងអភិវឌ្ឍន៍ នៃក្រសួងសេដ្ឋកិច្ច និងហិរញ្ញវត្ថុ, រាជធានីភ្នំពេញ
លេខទូស័ព្ទ: 017 900 181
លោក រ៉ង្ស រ៉ាដា, អ្នកគ្រប់គ្រងគម្រោង, អង្គភាពគ្រប់គ្រងគម្រោង, ក្រសួងសាធារណការ និងដឹកជញ្ជូន, រាជធានីភ្នំពេញ
លេខទូស័ព្ទ: 012 451 545

តារាងសិទ្ធិទទួលបានសំណង

ល.រ	ប្រភេទនៃការបាត់បង់	អនុវត្តចំពោះ	ប្រភេទគ្រួសាររងផលប៉ះពាល់	សិទ្ធិទទួលបាន	ការបញ្ជាក់ /ការអនុវត្ត
១. ការបាត់បង់សំណង់					
១ ក	ការបាត់បង់ ឬខូចខាតសំណង់ផ្សេងៗ និងទ្រព្យសម្បត្តិផ្សេងៗទៀត	សំណង់	ម្ចាស់សំណង់ ទោះជាដីនោះជាកម្មសិទ្ធិ ឬមិនមែនក៏ដោយ,ដោយមាន ឬគ្មានលិខិតអនុញ្ញាតសាងសង់	• សំណងជាសាច់ប្រាក់ក្នុងអត្រាថ្លៃជំនួសសម្រាប់ទ្រព្យសម្បត្តិដែលរងផលប៉ះពាល់ • ប្រជាពលរដ្ឋអាចរក្សាទុកសម្ភារពីការរុះរើសំណង់របស់ពួកគេដោយមិនមានការកាត់ប្រាក់ទេ • ករណីមានតែផ្នែកខ្លះនៃផ្ទះ/អគារ/សំណង់ត្រូវប៉ះពាល់ដោយសារការធ្វើលទ្ធកម្មដី ហើយផ្នែកនៅសល់មានលក្ខណៈពុំអាចប្រើប្រាស់បាន សំណងនឹងត្រូវផ្តល់ជូនចំពោះសំណង់ទាំងមូលតាមថ្លៃជំនួស។ • ប្រសិនបើប្រជាពលរដ្ឋជាក្រុមងាយរងគ្រោះ សូមមើលចំណុច ៤ ខាងក្រោម។ • ការគណនាអត្រា នឹងផ្អែកទៅតាមតំបន់ដែលរងផលប៉ះពាល់ជាក់ស្តែង និងមិនមែនតំបន់ដែលអាចប្រើប្រាស់បាននោះទេ។ • សម្រាប់ប្រជាពលរដ្ឋដែលផ្លាស់ប្តូរទីតាំងទៅកន្លែងថ្មី ប្រាក់ឧបត្ថម្ភសម្រាប់ចំណាយលើការផ្លាស់ប្តូរទីតាំងនឹងផ្តល់ជូន	សំណងនឹងត្រូវបានផ្តល់ជូនជាទម្រង់សាច់ប្រាក់ដោយគ្មានការកាត់សម្រាប់ការរំលោះ ឬសម្ភារនៅសល់ពីការរុះរើទេ ប្រសិនបើមេគ្រួសាររៀបការរួច ហើយសំណងនឹងត្រូវផ្តល់ជូននៅចំពោះមុខទាំងប្តីនិងប្រពន្ធ។ ចំនួនប្រាក់សរុប សម្រាប់មួយគ្រួសារ ផ្អែកលើថ្លៃចំណាយមធ្យមសម្រាប់ការដឹកជញ្ជូនទៅទីតាំងថ្មី • ចម្ងាយត្រឹម ៥ គម • ចម្ងាយលើសពី ៥ គម
២.ការបាត់បង់ដើមឈើ					

ល.រ	ប្រភេទនៃការបាត់បង់	អនុវត្តចំពោះ	ប្រភេទគ្រួសារផ្ទះ	សិទ្ធិទទួលបាន	ការបញ្ជាក់ /ការអនុវត្ត
២ ក	ការបាត់បង់ដំណាំនិងដើមឈើហូបផ្លែ	ដើមឈើ	គ្រួសារផ្ទះ ប៉ះ ពាល់ទាំងអស់ដែលជាម្ចាស់ដីស្របច្បាប់ដោយមិនគិតពីស្ថានភាពកម្មសិទ្ធិដីធ្លី / សិទ្ធិកាន់កាប់	• **ចំពោះដំណាំស្រូវ ឬដំណាំកសិផល ៖ ចំណូលសុទ្ធប្រចាំឆ្នាំ x ១ឆ្នាំ** លើសពីនេះ គ្រួសារផ្ទះ ប៉ះ ពាល់ អាចប្រមូលផល និងទទួលចំណូលពីដំណាំដាំដែលមិនទាន់ប្រមូលផល • **ចំពោះដើមឈើហូបផ្លែ៖** ថ្លៃជំនួសសម្រាប់ការបាត់បង់ គិតតាមរូបមន្តដូចខាងក្រោម ៖ [(**ទិន្នផលប្រចាំឆ្នាំ**) x (**តម្លៃទីផ្សារ**) x (**ចំនួនឆ្នាំដែលនឹងផ្តល់ផល**)] + **ថ្លៃគ្រាប់ពូជ** ដើមឈើហូបផ្លែដែលអាចមានអាយុ និងការលូតលាស់លើសពី ៥ ឆ្នាំ ត្រូវបានគណនាដូចខាងក្រោម៖ • កូនឈើមានអាយុក្រោម ១ ឆ្នាំ ពុំមានសំណងទេ ដោយសារអាចដាំឡើងវិញបាន។ មានការផ្តល់ជូនតែថ្លៃគ្រាប់ពូជ។ • ដើមឈើនៅតូច (អាយុ ១ ទៅ ៣ ឆ្នាំ)៖ ត្រូវបានផ្តល់ថ្លៃត្រឹមតែ មួយភាគបីនៃតម្លៃពេញ ដោយសារវាអាចដាំឡើងវិញបាន បូកបន្ថែមថ្លៃគ្រាប់ពូជនោះ។ • ដើមឈើទើបចេញផ្កាផ្លែមួយចំនួន (អាយុពី ៣ ទៅ ៥ ឆ្នាំ) ៖ ត្រូវបានផ្តល់ថ្លៃត្រឹមតែ ពីរភាគបីនៃតម្លៃពេញ បូកបន្ថែមថ្លៃគ្រាប់ពូជនោះ។ • ដើមឈើពេញវ័យ (អាយុលើសពី៥ ឆ្នាំ) ផ្តល់ផលពេញលេញ ត្រូវបានផ្តល់ថ្លៃពេញ ១០០% បូកបន្ថែមថ្លៃគ្រាប់ពូជនោះ។	ការសិក្សាថ្លៃជំនួស នឹងកំណត់ចំណូលប្រចាំឆ្នាំ ការជូនដំណឹងជាមុន នឹងត្រូវផ្តល់ជូនដើម្បីប្រមូលផលយ៉ាងហោចណាស់ ៣ខែ មុនពេលចាប់ផ្តើមការងារសាងសង់ ហើយប្រជាពលរដ្ឋនឹងត្រូវ ជម្រះដើមឈើរបស់ពួកគេចេញពីតំបន់អនុ គម្រោងក្នុងរយៈពេលមួយខែបន្ទាប់ពីទទួលបានសំណង។
៣.ការបាត់បង់ប្រភពចិញ្ចឹមជីវិត និងការស្តារប្រាក់ចំណូលឡើងវិញ					

ល.រ	ប្រភេទនៃការបាត់បង់	អនុវត្តចំពោះ	ប្រភេទគ្រួសារងងផលប៉ះពាល់	សិទ្ធិទទួលបាន	ការបញ្ជាក់ /ការអនុវត្ត
៣ ក	ការបាត់បង់អាជីវកម្ម	ការបាត់បង់ចំណូល	ប្រជាពលរដ្ឋទាំងអស់ដែលប្រកបអាជីវកម្មហើយត្រូវផ្លាស់ទីតាំង	• ចំពោះអាជីវកម្ម ដែលត្រូវផ្លាស់ទៅទីតាំងថ្មី -សំណងស្មើនឹងការបាត់បង់នូវចំណូលសុទ្ធ ចំនួន ២ ខែ ។ • ចំពោះអាជីវកម្មដែលត្រូវរំកិលថយក្រោយនៅលើទីតាំងដីតែមួយ (រំកិលថយក្រោយ ឬរំកិលនៅក្នុងបរិវេណដីដដែល) - សំណងស្មើនឹងការបាត់បង់នូវចំណូលសុទ្ធ ចំនួន ១ ខែ។ • គ្មានសំណង ចំពោះអាជីវកម្មពាក់ព័ន្ធនឹងសកម្មភាពខុសច្បាប់ ដូចជា ល្បែងស៊ីសង ពេស្យាចារ គ្រឿងញៀន ឬសកម្មភាពស្រដៀងគ្នានេះ។	ការសិក្សាថ្លៃជំនួស នឹងត្រូវធ្វើងផ្ទាត់និងកំណត់ចំនួនទឹកប្រាក់ដោយផ្អែកលើឯកសារគាំទ្រផ្សេងៗ។
៣ ខ	ការបាត់បង់ប្រាក់ចំណូលក្នុងអំឡុងពេលអន្តរកាល - **ការឧបត្ថម្ភចំណូលចិញ្ចឹមជីវិត**	ការបាត់បង់ចំណូល	គ្រួសារងងផលប៉ះពាល់ដែលបាត់បង់ប្រាក់ចំណូលក្នុងអំឡុងពេលអន្តរកាល ដោយមិនគិតអំពីស្ថានភាពកម្មសិទ្ធិ	• ប្រាក់ឧបត្ថម្ភសរុប ស្មើនឹងប្រាក់ចំណូល ៣ ខែ ផ្អែកលើអត្រាភាពក្រីក្រប្រចាំខែផ្លូវការ ដែលកំណត់ដោយរាជរដ្ឋាភិបាល។ **អត្រាភាពក្រីក្រប្រចាំខែ x ចំនួនសមាជិកក្នុងគ្រួសារងងផលប៉ះពាល់ x ៣** • ករណីប្រជាពលរដ្ឋងងផលប៉ះពាល់ត្រូវបានចាត់ថ្នាក់ជាក្រុមប្រជាពលរដ្ឋក្រីក្រ និងងាយរងគ្រោះ នឹងទទួលបានប្រាក់ឧបត្ថម្ភសរុបខាងលើចំនួនទ្វេ ដង។	ក្រុមជនក្រីក្រ និងងាយរងគ្រោះ នឹងត្រូវបានកំណត់អត្តសញ្ញាណក្នុងកំឡុងពេលអង្កេតវាស់វែងលម្អិត។ ប្រសិនបើការបាត់បង់ប្រាក់ចំណូលពិតប្រាកដខ្ពស់ជាងចំនួនដែលបានគណនាដោយរូបមន្តអត្រាភាពក្រីក្រប្រចាំខែ X សមាជិកនៅក្នុងគ្រួសារ X ៣ ប្រជាពលរដ្ឋ នឹងត្រូវទូទាត់សងដោយផ្អែកលើការបាត់បង់ជាក់ស្តែង។
៣ គ	ការបាត់បង់ប្រភពចិញ្ចឹមជីវិតជា អចិន្ត្រៃយ៍ដោយសារការផ្លាស់ទីតាំង	ការស្តារប្រាក់ចំណូល	គ្រួសារងងផលប៉ះពាល់ដែលបាត់បង់អចិន្ត្រៃយ៍នូវប្រភពចិញ្ចឹមជីវិតដោយមិនគិតអំពីស្ថានភាពកម្មសិទ្ធិ	• Entitled to participate in any one of **the Livelihood** មានសិទ្ធិចូលរួមកម្មវិធី ១ ក្នុងចំណោម**កម្មវិធីស្តារប្រភពចំណូលចំនួន ៣**៖ • **ការស្តារប្រភពចំណូលពឹងផ្អែកលើដី** សម្រាប់គ្រួសារងងផលប៉ះពាល់ដែលបាត់បង់ជាអចិន្ត្រៃយ៍នូវប្រភពចិញ្ចឹមជីវិតផ្អែកលើដី៖ (i) សម្រប	The program will be based on the choice of the AP. ការស្តារប្រាក់ចំណូលផ្អែកលើធនធានដី គឺសម្រាប់គ្រួសារងងផល

ល.រ	ប្រភេទនៃការបាត់បង់	អនុវត្តចំពោះ	ប្រភេទគ្រួសាររងផលប៉ះពាល់	សិទ្ធិទទួលបាន	ការបញ្ជាក់ /ការអនុវត្ត
				សម្រួលដើម្បីទទួលបាននូវប្រភពចំណូលផ្អែកលើធនធានដីផ្សេងទៀត ដូចជាការធ្វើសួនបន្លែ ដាំដើមឈើ ហូបផ្លែ និងចិញ្ចឹមសត្ត, ប្រសិនបើមានប្រភពដីកសិកម្ម (ii)ការបណ្តុះបណ្តាលអំពីការដាំដុះ ឬការចិញ្ចឹមសត្ត និង (iii)ការឧបត្ថម្ភជាប្រាក់សរុបចំនួន **២០០ ដុល្លារអាមេរិក** ដើម្បីបង្កើតឡើងវិញនូវប្រភពចិញ្ចឹមជីវិតដែលបានបាត់បង់។ • ប្រសិនបើគ្មានដីទំនេរសមស្រប សម្រាប់ប្រើប្រាស់ទេ នោះ ប្រជាពលរដ្ឋរងផលប៉ះពាល់ អាចជ្រើសរើសយក **កម្មវិធីស្តារប្រភពចំណូលផ្អែកលើការបម្រើការងារ ឬ មុខរបរអាជីវកម្ម**។ **ឬ** • **ការស្តារប្រភពចំណូលផ្អែកលើការបម្រើការងារ** សម្រាប់គ្រួសាររងផលប៉ះពាល់ដែលបាត់បង់ការងារជា អចិន្ត្រៃយ៍៖ (i)ផ្តល់ការបណ្តុះបណ្តាលលើការងារជំនាញ និង (ii)ផ្តល់ប្រាក់ឧបត្ថម្ភបន្ថែមស្មើនឹង **៣ ខែ** នៃអត្រាភាពក្រីក្រប្រចាំខែកំណត់ដោយរាជរដ្ឋាភិបាល សម្រាប់ជាប្រាក់ចំណូលចិញ្ចឹមជីវិត ក្នុងអំឡុងពេលចូលរួមក្នុងកម្មវិធីបណ្តុះបណ្តាលការងារជំនាញ។ **ឬ** • **ការស្តារប្រាក់ចំណូលផ្អែកលើមុខរបរអាជីវកម្ម** សម្រាប់គ្រួសាររងផលប៉ះពាល់ ដែលបាត់បង់អចិន្ត្រៃយ៍នូវមុខរបរអាជីវកម្ម ឬ គ្រួសាររងផល	ប៉ះពាល់ដែលបាត់បង់ប្រភពចិញ្ចឹមជីវិតផ្អែកលើដី។ ការស្តារប្រាក់ចំណូលផ្អែកលើមុខរបរការងារ គឺសម្រាប់គ្រួសាររងផលប៉ះពាល់ដែលបាត់បង់ប្រភពចិញ្ចឹមជីវិតផ្អែកលើរបរការងារ។ ៣ ខែ នៃប្រាក់ចំណូលផ្អែកលើអត្រានៃភាពក្រីក្រ = (អត្រានៃភាព

| ល.រ | ប្រភេទនៃការបាត់បង់ | អនុវត្តចំពោះ | ប្រភេទគ្រួសារងងង

ល.រ	ប្រភេទនៃការបាត់បង់	អនុវត្តចំពោះ	ប្រភេទគ្រួសាររងផលប៉ះពាល់	សិទ្ធិទទួលបាន	ការបញ្ជាក់ /ការអនុវត្ត
				និង (ii) ផ្តល់អាទិភាពឱកាសការងារធ្វើក្នុងគម្រោង។	
៤.ទ្រព្យសម្បត្តិរងផលប៉ះពាល់បណ្តោះអាសន្នកំឡុងពេលសាងសង់					
៤ ក	Temporarily affected land and non-land assets during construction ផលប៉ះពាល់លើដី និងទ្រព្យសម្បត្តិមិនមែនដីបណ្តោះអាសន្នក្នុងពេលសាងសង់	ផលប៉ះពាល់បណ្តោះអាសន្នលើសំណង់	ម្ចាស់ដី និងទ្រព្យសម្បត្តិផ្សេងទៀតដែលរងផលប៉ះពាល់ជា ប បណ្តោះអាសន្ន ដោយមិនគិតពីស្ថានភាពកាពជាម្ចាស់ដី	• អ្នកម៉ៅការនឹងបង់ថ្លៃឈ្នួលដី/សំណង់ដែលត្រូវការសម្រាប់ការដ្ឋានសាងសង់នៅខាងក្រៅដីចំណីផ្លូវ • ចំពោះទ្រព្យសម្បត្តិនៅក្នុងរបៀងផលប៉ះពាល់ ៖ គ្មានសំណងសម្រាប់ទ្រព្យសម្បត្តិដីធ្លី / មិនមែនដីធ្លីដែលរងផលប៉ះពាល់ជាបណ្តោះអាសន្ននោះទេ ប៉ុន្តែអ្នកម៉ៅការសំណង់នឹងទទួលខុសត្រូវក្នុងការស្តារ/ការកសាងឡើងវិញនូវរាល់ទ្រព្យសម្បត្តិដែលរងផលប៉ះពាល់បណ្តោះអាសន្នដូចជា ផ្លូវក្រាលឥដ្ឋ, ផ្លូវចូលផ្ទះ, បង្គោលផ្លាកសញ្ញា, និងសំយាបតបន្ថែមផ្សេងៗ។ល។	ជាផ្នែកនៃកិច្ចសន្យាការងារសាងសង់ រាល់ផ្លូវក្រាលឥដ្ឋ,ផ្លូវថ្មើរជើង, ផ្លូវចូល / ផ្លូវចេញចូលផ្ទះ និងទ្រព្យសម្បត្តិដែលនៅជាប់នឹងផ្លូវថ្នល់រួមប្រព័ន្ធបង្ហូរទឹក និងគ្រឿងបរិក្ខារផ្សេងៗទៀត នឹងត្រូវជួសជុល ឬផ្លាស់ប្តូរឱ្យស្ថិតក្នុងស្ថានភាពដូចដើម ឬប្រសើរជាងមុន។ គ្រួសាររងផលប៉ះពាល់នឹងត្រូវជូនដំណឹងក្នុងរយៈពេលយ៉ាងតិច ៣ ខែជាមុន គិតចាប់ពីកាលបរិច្ឆេទជាក់ស្តែងដែលដី / ទ្រព្យសម្បត្តិមិនមែនជាដីនឹងត្រូវបានប្រើប្រាស់ជាបណ្តោះអាសន្នឬប៉ះពាល់ដោយគម្រោង។
4b	ផលប៉ះពាល់បណ្តោះអាសន្នចំពោះទ្រព្យសម្បត្តិដែលមាន ផលិតភាពក្នុង កំឡុងពេលសាងសង់ (ឧ.ហាង និងតូប និងទីតាំង និងសំណង់ពាក់ព័ន្ធរួមមានជញ្ជាំង,លូ, បណ្តាញ។ ល។)	ផលប៉ះពាល់បណ្តោះអាសន្នលើប្រភពជីវភាព	ម្ចាស់ទ្រព្យ ដោយមិនគិតពីស្ថានភាពកម្មសិទ្ធិ	• ជំនួយជាសាច់ប្រាក់តែមួយលើកចំនួន ១០០ ដុល្លារ / គ្រួសារ សម្រាប់ការរុះរើតូប, ការសាងសង់ឡើងវិញ និងការបាត់បង់ប្រាក់ចំណូលបណ្តោះអាសន្នក្នុងពេលផ្លាស់ប្តូរទីតាំងទៅទីបណ្តោះអាសន្ន។ • ចំពោះការបាត់បង់ប្រាក់ចំណូលដោយសារការរំខានអាជីវកម្មសូមមើលលេខ ៣ ក និង៣ខ។ • តូបនៅតាមទីតាំងសាងសង់ដែលត្រូវការផ្លាស់ប្តូរជាបណ្តោះអាសន្ន នឹងត្រូវរុះរើទៅ ជិតៗនោះ ដើម្បីបន្តអាជីវកម្មរបស់ពួកគេដោយគ្មានការរំខាន។	អ្នកម៉ៅការ នឹងត្រូវរ៉ាប់រងថ្លៃដើមដូចមានចែងក្នុងកិច្ចសន្យានិងផែនការគ្រប់គ្រងបរិស្ថាន។ ការស្តាបនា និងថែទាំ នឹងត្រូវធ្វើឡើងដើម្បីកាត់បន្ថយការខូចខាតឱ្យនៅតិចតួចបំផុត។ រយៈពេលរំខាននឹងត្រូវបានបង្រួមឱ្យនៅតិចបំផុតតាមដែលអាចធ្វើទៅបាន។

ល.រ	ប្រភេទនៃការបាត់បង់	អនុវត្តចំពោះ	ប្រភេទគ្រួសាររងផលប៉ះពាល់	សិទ្ធិទទួលបាន	ការបញ្ជាក់ /ការអនុវត្ត
៥. ផលប៉ះពាល់ដែលមិនអាចដឹងទុកជាមុន					
៥ក	ផលប៉ះពាល់លើការងារធ្វើលទ្ធកម្មដី និងដោះស្រាយផលប៉ះពាល់ដែល មិនអាចដឹងទុកជាមុន		ប្រជាពលរដ្ឋដែលរងផលប៉ះពាល់	• ប្រជាពលរដ្ឋដែលរងផលប៉ះពាល់ថ្មី ដែលនឹងត្រូវបានកំណត់អត្តសញ្ញាណ (ឧទាហរណ៍ អ្នកដែលនឹងត្រូវរាប់បញ្ចូលក្នុងចំណោមអ្នកដែលរងផលប៉ះពាល់ដោយសារតែការផ្លាស់ប្តូរការចនាប្លង់នៅក្នុងអនុគម្រោង ឬការផ្លាស់ប្តូរអ័ក្ស នៅមុនពេលឬនៅពេលសាងសង់) មានសិទ្ធិដូចគ្នានឹងអ្នករងផលប៉ះពាល់ផ្សេងទៀត។	អគ្គនាយកដ្ឋានដោះស្រាយផលប៉ះពាល់ ត្រូវធានាឱ្យមានការវាយតម្លៃផលប៉ះពាល់សង្គម និងធ្វើបច្ចុប្បន្នភាពឬបង្កើតផែនការដោះស្រាយផលប៉ះពាល់ថ្មី ឬផែនការបន្ថែមអាស្រ័យលើវិសាលភាពនៃការផ្លាស់ប្តូរផលប៉ះពាល់។ ផលប៉ះពាល់ដែលមិនដឹងជាមុននឹងត្រូវបានចងក្រងជាឯកសារ និងកាត់បន្ថយផលប៉ះពាល់ដោយផ្អែកលើគោលការណ៍ដែលមាននៅក្នុងផែនការដោះស្រាយផលប៉ះពាល់លម្អិតនេះ។

ឧបសម្ព័ន្ធទី២៖ សមាសភាព នៃ PGRC និងលេខទូរសព្ទទំនាក់ទំនង

សមាសភាពនៃ PGRC ខេត្តបន្ទាយមានជ័យ

តារាងខាងក្រោមសង្ខេបអំពីសមាសភាព PGRC នៃខេត្ត**បន្ទាយមានជ័យ**

ល.រ	ឈ្មោះ	តួនាទី	ការកិច្ចក្នុង GRC
1	ឯកឧត្តម អ៊ុំ រាត្រី	អភិបាល នៃគណៈអភិបាលខេត្ត	ប្រធាន
2	លោក អាង ណារិទ្ធិ	ប្រធានមន្ទីររៀបចំដែនដី នគរូបនីយកម្ម សំណង់ និងសុរិយាដីខេត្ត	អនុប្រធាន
3	លោក ប៊ីង គឹមសឹង	ប្រធានមន្ទីរសេដ្ឋកិច្ច និងហិរញ្ញវត្ថុខេត្ត	សមាជិក
4	លោក ណង វ៉ុទ្ធី	នាយករងរដ្ឋបាលខេត្ត	សមាជិក
5	លោកអភិបាល នៃគណៈអភិបាលគ្រប់ ក្រុង ស្រុក		សមាជិក
6	លោក ឈុន ប៊ុនថា	នាយកទីចាត់ការអន្តរវិស័យសាលាខេត្ត	សមាជិក
7	លោក កែ សម្បត្តិ	ប្រធានការិ.កិច្ចការច្បាប់ និងសុវត្ថិភាពសាធារណៈសាលាខេត្ត	សមាជិក
8	លោក លោកស្រី តំណាងសហគមន៍ប្រើប្រាស់ទឹក		សមាជិក

សមាសភាព និងលេខទូរសព្ទ សម្រាប់ខេត្តបន្ទាយមានជ័យ

ព័ត៌មានលម្អិតទំនាក់ទំនងនៃកម្រិតនីមួយៗនៃ GRM មានដូចខាងក្រោម:

ឈ្មោះ និងលេខទំនាក់ទំនងរបស់ នៅកម្រិតឃុំ/សង្កាត់

ល.រ.	ឈ្មោះ	តួនាទី	លេខទំនាក់ទំនង
1	លោកស្រី ឆាត សុជា	ចៅសង្កាត់ពន្លា	012 596 039

ឈ្មោះ និងលេខទំនាក់ទំនងរបស់ នៅកម្រិតស្រុក/ខណ្ឌ/ក្រុង

ល.រ.	ឈ្មោះ	តួនាទី	លេខទំនាក់ទំនង
1	លោក សេង សុផល	អភិបាលក្រុងសិរីសោភ័ណ	077 777 638

ឈ្មោះ និងលេខទំនាក់ទំនងរបស់ នៅកម្រិត GDR

ល.រ.	ឈ្មោះ	តួនាទី	លេខទំនាក់ទំនង
1	លោក សុក សុកក្ត្ចិ	ប្រធានការិយាល័យ, DIMDM	012 923 607
2	លោក ស៊ុន គន់ឌី	អនុប្រធានការិយាល័យ, DIMDM	012 849 790

ឈ្មោះ និងលេខទំនាក់ទំនងរបស់ នៅកម្រិតខេត្ត

ល.រ.	ឈ្មោះ	តួនាទី	លេខទំនាក់ទំនង
1	ឯ.ឧ ឃ្លោក នួយ	អភិបាលរងខេត្ត	016 889 777
2	លោក ឈុន ប៊ុនថា	នាយកទីចាត់ការអន្តរវិស័យសាលាខេត្ត	012 716 516

ពាក្យបណ្តឹងបុគ្គល

គម្រោងកែលម្អគ្រប់គ្រងបរិស្ថានក្រុងជុំវិញបឹងទន្លេសាប ជំហាន ២

កាលបរិច្ឆេទបណ្តឹង		លេខ DMS
ឈ្មោះអ្នកដាក់ពាក្យបណ្តឹង		
លេខអត្តសញ្ញាណប័ណ្ណ សៀវភៅគ្រួសារ		
លេខទំនាក់ទំនង		
អាសយដ្ឋាន		
សេចក្តីសង្ខេបនៃពាក្យបណ្តឹង		
បញ្ជីឯកសារគាំទ្រ កស្តុតាង /		

ឈ្មោះ: (មេគ្រួសារ)

ហត្ថលេខា/ស្នាមមេដៃ:

កាលបរិច្ឆេទ:

ការចុះពាក្យបណ្តឹង

គម្រោងកែលម្អគ្រប់គ្រងបរិស្ថានក្រុងជុំវិញបឹងទន្លេសាប ជំហាន ២

ក្រុង-ស្រុក-ខណ្ឌ: _____

រាជធានី-ខេត្ត: _____

កាលបរិច្ឆេទនៃការទទួលពាក្យបណ្តឹង	ករណីលេខ	ឈ្មោះនិងអត្តសញ្ញាណប័ណ្ណអ្នកដាក់ពាក្យបណ្តឹង		ចំណុចសំខាន់នៃពាក្យបណ្តឹង
		ឈ្មោះ	អត្តសញ្ញាណបណ្ណ/សៀវភៅគ្រួសារ	

ព្រះរាជាណាចក្រកម្ពុជា
ជាតិ សាសនា ព្រះមហាក្សត្រ

លិខិតពីអភិបាលខណ្ឌ-ស្រុក

ក្រុង-ស្រុក-ខណ្ឌ: _____

រាជធានី-ខេត្ត: _____

បណ្តឹងបុគ្គល		
ករណីលេខ៖		
ឈ្មោះអ្នកដាក់ពាក្យបណ្តឹង		
កាលបរិច្ឆេទបណ្តឹង		
សេចក្តីសង្ខេបនៃពាក្យបណ្តឹង (ដូចគ្នានឹងពាក្យសុំចុះឈ្មោះបណ្តឹងតវ៉ាម្នាក់ៗ)		
កិច្ចប្រជុំគណៈកម្មការដោះស្រាយបណ្តឹងតវ៉ា		
កាលបរិច្ឆេទ:	ម៉ោង:	ទីតាំង:
អ្នកចូលរួម		
សេចក្តីសង្ខេបនៃការពិភាក្សា		
កាលបរិច្ឆេទនៃការចុះពិនិត្យទីតាំង (ប្រសិនបើមាន)		
លទ្ធផលនៃការប្រជុំ/សេចក្តីសម្រេច		

•បដិសេធ -គ្មានមូលដ្ឋានយោងតាមតារាងនៃសិទ្ធិទទួលបានសំណង •សមនឹងទទួល - បណ្តឹងបញ្ជូនបន្តទៅអគ្គនាយកដ្ឋានដោះស្រាយផលប៉ះពាល់ដោយសារគម្រោងអភិវឌ្ឍន៍ដើម្បី ចាត់វិធានការ

ឈ្មោះ:

តួនាទី:

ហត្ថលេខា/ស្នាមមេដៃ:

កាលបរិច្ឆេទ:

Annex 4: Establishment of PGRC

Kingdom of Cambodia

National Religion King

The Administration of BMC

Nº 243 / 20 SSR

DECISION

About

Establishment of Grievance Redress Committee (GRC) for Addressing of Grievance Process of Affected People by Integrated Urban Environmental Management in the Tonle Sap Basin Project phase 2 (TS2) at Banteay Meanchey Province.

Governor of Banteay Meanchey Province

_ Saw the constitution of the Kingdom of Cambodia

_ Saw the Royal Decree Nº NS/RKT 0918/925 dated 06 September 2018 on the appointment of the Royal Government of Cambodia

_ Saw the Royal Count Nº NS/RKM/0618/012 dated 28th June 2018 which promulgating the law on the organization and functioning of the Council of Minister

_ Saw the Royal Court Nº **NS/RKM** 0508/017 dated 24th of May 2008 which promulgating the Law on the administration management of municipality, province, city, district

_ Saw the Royal Count Nº NS/RKT 0519/594 dated 08th May 2019 on the appointment of the governor of Banteay Meanchey province.

_ Saw the sub-decree N0 216 RNK BK date 14 of December 2019 of the Royal of Cambodia on the roles of duties and working relationship of the Board of Provincial Governor, Board of city governors and board of district governors.

_ Base on the letter Nº 825 SHV.RCP date 10 February 2020 of Ministry of Economic and Finance.

_ Checking by necessary of Administration of Banteay Meanchey province

Article 1

Establishment of the Grievance Redress Committee (GRC) for Addressing of Grievance Process of Affected People by Integrated Urban Environmental Management in the Tonle Sap Basin Project phase 2 (TS2) at Banteay Meanchey Province that have composition below;

I. Provincial Grievance Redress Committee (PGRC)

No.	Name	Position	Position assigned
1	Excellency Um Reatrey	Provincial Governor	Chair
2	Mr. Ang Narith	Director of Provincial Department of Land Management, Urban Planning, Construction and Cadastral	Vice Chair
3	Mr. Bueng Kemsing	Director of Provincial Department of Economic and Finance	Member
4	Mr.Norng Vuthy	Administration Director of the BMC province	Member
5	All district governors		Member
6	Mr. Chhun Buntha	Director of Inter-Sectoral of Provincial	Member
7	Mr. Ke Sambath	Office Director of Working Law and Public Safety of Provincial	Member
8	All the representatives of the community water user group		Member

Article 2

Any provisions of the Administration of Banteay Meanchey Province which are contrary to the decision shall be considered abrogated.

Article 3

Administration Director, Director of Work Management, the head of unit under provincial hall, Relevant Director of Department, District Governor as detail in Article 1 above must to respond implement with this decision by their respective duties after date of signature.

On Tuesday, 9 Ruoch, Month Phalkun Year Kul, Ekasak P.S 256

Banteay Meanchey Date 17 March 2020

Receive Place

_ Ministry of Interior

_ Ministry of Economic and Finance

_ Ministry of Land Management, Urban Planning

and Construction

_ Provincial Council

_ Same Article 3

_Chronological document

ព្រះរាជាណាចក្រកម្ពុជា
ជាតិ សាសនា ព្រះមហាក្សត្រ

រដ្ឋបាលខេត្តបន្ទាយមានជ័យ
លេខ: ២៤៣/ សសរ
២០

សេចក្តីសម្រេច
ស្តីពី
ការបង្កើតគណៈកម្មការដោះស្រាយបណ្តឹងតវ៉ា (Grievance Redress)
សម្រាប់ដំណើរការដោះស្រាយនូវតណ្ហាបណ្តឹងផ្សេងៗរបស់ប្រជាពលរដ្ឋដែលទទួលរងផលប៉ះពាល់
ដោយសារគម្រោងអភិវឌ្ឍន៍ធារាសាស្ត្រ និងកាត់បន្ថយទឹកជំនន់ ស្ថិតក្នុងភូមិសាស្ត្រខេត្តបន្ទាយមានជ័យ

អភិបាល នៃគណៈអភិបាលខេត្តបន្ទាយមានជ័យ

- បានឃើញរដ្ឋធម្មនុញ្ញនៃព្រះរាជាណាចក្រកម្ពុជា
- បានឃើញព្រះរាជក្រឹត្យលេខ នស/រកត/០៩១៨/៩២៥ ចុះថ្ងៃទី០៦ ខែកញ្ញា ឆ្នាំ២០១៨ ស្តីពីការតែងតាំងរាជរដ្ឋាភិបាល នៃព្រះរាជាណាចក្រកម្ពុជា
- បានឃើញព្រះរាជក្រឹត្យ នស/រកម/០៦១៨/០១២ ចុះថ្ងៃទី២៨ ខែមិថុនា ឆ្នាំ២០១៨ ដែលប្រកាសឲ្យប្រើច្បាប់ស្តីពីការរៀបចំ និងប្រព្រឹត្តទៅនៃគណៈរដ្ឋមន្ត្រី
- បានឃើញព្រះរាជក្រមលេខ នស/រកម/០៥០៨/០១៧ ចុះថ្ងៃទី២៤ ខែឧសភា ឆ្នាំ២០០៨ ដែលប្រកាសឲ្យប្រើច្បាប់ស្តីពីការគ្រប់គ្រងរដ្ឋបាលរាជធានី ខេត្ត ក្រុង ស្រុក ខណ្ឌ
- ឃើញព្រះរាជក្រឹត្យលេខនស/រកត/០៥១៩/៥៩៤ ចុះថ្ងៃទី០៨ ខែឧសភា ឆ្នាំ២០១៩ ស្តីពីការត្រាស់បង្គាប់តែងតាំងជា អភិបាល នៃគណៈអភិបាលខេត្តបន្ទាយមានជ័យ
- បានឃើញអនុក្រឹត្យលេខ២១៦ អនក្រ.បក ចុះថ្ងៃទី១៤ ខែ ធ្នូ ឆ្នាំ២០០៩ ស្តីពីតួនាទីភារកិច្ច និង ទំនាក់ទំនងការងាររបស់ ក្រុមប្រឹក្សា គណៈអភិបាលខេត្ត ក្រុមប្រឹក្សា គណៈអភិបាលក្រុង និង ក្រុមប្រឹក្សា គណៈអភិបាលស្រុក
- យោងលិខិតលេខ ៨២៥ សហវ.អជផ ចុះថ្ងៃទី១០ ខែកុម្ភៈ ឆ្នាំ២០២០ របស់ក្រសួងសេដ្ឋកិច្ច និងហិរញ្ញវត្ថុ
- ពិនិត្យតាមការចាំបាច់របស់រដ្ឋបាលខេត្តបន្ទាយមានជ័យ

សម្រេច

ប្រការ១. -

ត្រូវបានបង្កើតគណៈកម្មការដោះស្រាយបណ្តឹងតវ៉ា (Grievance Redress) សម្រាប់ដំណើរការដោះស្រាយនូវរាល់បណ្តឹងផ្សេងៗរបស់ប្រជាពលរដ្ឋដែលទទួលរងផលប៉ះពាល់ដោយសារគម្រោងអភិវឌ្ឍន៍ធារាសាស្ត្រ និងកាត់បន្ថយទឹកជំនន់ ស្ថិតក្នុងភូមិសាស្ត្រខេត្តបន្ទាយមានជ័យដែលមានសមាសភាពដូចខាងក្រោម:

១-ឯកឧត្តម ម៉ុ រ៉ាត្រី អភិបាលខេត្ត ប្រធាន

អាសយដ្ឋាន: ផ្លូវជាតិលេខ៥ សង្កាត់អូរអំបិល ក្រុងសិរីសោភ័ណ ខេត្តបន្ទាយមានជ័យ ទូរស័ព្ទ-ទូរសារ (Phone-Fax) ០៥៤ ៧១០០៦២ Email: banteaymeanchey1@gmail.com , Web: www.bmc.ncdd.gov.kh , www.facebook.com/adminbmcs , Telegram: 012 673086 / 092 947310

២-លោក **អាន ណារ៉ារ៉ា**	ប្រធានមន្ទីររៀបចំដែនដី នគរូបនីយកម្ម សំណង់ និងសុរិយោដីខេត្ត	អនុប្រធាន
៣-លោក **ម៉ន គឹមសីន**	ប្រធានមន្ទីរសេដ្ឋកិច្ច និងហិរញ្ញវត្ថុខេត្ត	សមាជិក
៤-លោក **ណន ឌុន្នី**	នាយករងរដ្ឋបាលសាលាខេត្ត	សមាជិក
៥-លោកអភិបាល នៃគណៈអភិបាលគ្រប់ ក្រុង ស្រុក		សមាជិក
៦-លោក **ឈុន ម៉ុនឌី**	នាយកទីចាត់ការអន្តរវិស័យសាលាខេត្ត	សមាជិក
៧-លោក **កែ សម្ញត្តិ**	ប្រធានការិ.កិច្ចការច្បាប់ និងសុវត្ថិភាពសាធារណៈសាលាខេត្ត	សមាជិក
៨-លោក លោកស្រី តំណាងសហគមន៍ប្រើប្រាស់ទឹក		សមាជិក

ប្រការ២. -

បទបញ្ញត្តិទាំងឡាយណារបស់រដ្ឋបាលខេត្តដែលមានខ្លឹមសារផ្ទុយពីសេចក្តីសម្រេចនេះត្រូវទុកជានិរាករណ៍។

ប្រការ៣. -

នាយករដ្ឋបាល នាយកទីចាត់ការ ប្រធានអង្គភាពចំណុះសាលាខេត្ត ប្រធានមន្ទីរ អង្គភាព១ក់ព័ន្ធ អភិបាលគ្រប់ក្រុង ស្រុក និងសមាជិកខ្លួនដូចមានចែងក្នុងប្រការ១ខាងលើ ត្រូវទទួលបន្ទុកអនុវត្តសេចក្តីសម្រេចនេះ តាមការកិច្ចរៀងៗខ្លួន ចាប់ពីថ្ងៃចុះហត្ថលេខាតទៅ។

ថ្ងៃអង្គារ.ទី១៣ ខែជិត្ថ ឆ្នាំកុរ ឯកស័ក ព.ស២៥៦៣
ធ្វើនៅខេត្តបន្ទាយមានជ័យ.ថ្ងៃទី ១៧ ខែ ១០ ឆ្នាំ២០២០

អភិបាលខេត្ត

ករណ្ឌទទួល ÷
-ក្រសួងមហាផ្ទៃ
-ក្រសួងសេដ្ឋកិច្ច និងហិរញ្ញវត្ថុ
-ក្រសួងរៀបចំដែនដីនគរូបនីយកម្ម និងសំណង់
-ក្រុមប្រឹក្សាខេត្ត
-ដូចប្រការ៣
-ឯកសារ កាលប្បវត្តិ

អ៊ុំ រាត្រី

អាសយដ្ឋាន: ផ្លូវជាតិលេខ៥ សង្កាត់អូរអ៊ីបិល ក្រុងសិរីសោភ័ណ ខេត្តបន្ទាយមានជ័យ ទូរស័ព្ទ-ទូរសារ (Phone-Fax) ០៥៤ ៧១០០៦២ Email: banteaymeanchey1@gmail.com , Web: www.bmc.ncdd.gov.kh , www.facebook.com/adminbmcs , Telegram: 012 673086 / 092 947310